ANALYSIS OF OZONE LAYER DEPLETION OVER INDUSTRIAL REGIONS IN INDIA

A project work submitted for the degree of

BACHELOR OF TECHNOLOGY
IN
COMPUTER SCIENCE AND ENGINEERING

Submitted by

K. Padmaja (23555A0507)

P. Nagesh Varma (23555A0512)

Y. Tanmai Sairam (22551A05J8)

Under the Supervision of

Mr. T. SRIDHAR REDDY, Assistant Professor

DEPT. OF CSE

DEPARTMENT OF COMPUTER SCIENCE AND ENGINEERING

GODAVARI INSTITUTE OF ENGINEERING & TECHNOLOGY (AUTONOMOUS)

Approved by AICTE|NAAC 'A++'| Recognized by UGC, U/Sec. 2(f) & 12(B)| Permanently Affiliated to JNTUK, Kakinada

April, 2026

BONAFIDE CERTIFICATE

Certified that this project report **"ANALYSIS OF OZONE LAYER DEPLETION OVER INDUSTRIAL REGIONS IN INDIA"** is the bonafide work of **"K.Padmaja (23555A0507), P.Nagesh Varma (23555A0512), Y.Tanmai Sairam (22551A05J8)"**, who carried out the project work under my supervision during the year 2025 to 2026, towards partial fulfillment of the requirements of the Degree of Bachelor of Technology in Computer Science & Engineering as administered under the Regulations of Godavari Institute of Engineering & Technology(Autonomous), Rajahmahendravaram AP, India and award of the Degree from Jawaharlal Nehru Technological University, Kakinada. The results embodied in this report have not been submitted to any other University for the award of any degree.

Signature of the Head of the Department

Dr. B. SUJATHA

Professor

Signature of the Supervisor

Mr. T. SRIDHAR REDDY

Assistant Professor

External viva voce conducted on _____

External Examiner

CERTIFICATE OF AUTHENTICATION

We solemnly declare that this project report **"ANALYSIS OF OZONE LAYER DEPLETION OVER INDUSTRIAL REGIONS IN INDIA"** is the bonafide work done purely by us, carried out under the supervision of **Mr. T.SRIDHAR REDDY**, towards partial fulfillment of the requirements of the Degree of **BACHELOR OF TECHNOLOGY** in **COMPUTER SCIENCE AND ENGINEERING** as administered under the Regulations of Godavari Institute of Engineering & Technology(Autonomous), Rajamahendravaram, AP, India and award of the Degree from Jawaharlal Nehru Technological University, Kakinada during the year 2025-2026.

We also declare that no part of this document has been taken up verbatim from any source without permission from the author(s)/publisher(s). Wherever few sentences, findings, images, diagrams or any other piece of information has been used for the sake of completion of this work, we have adequately referred to the document source. In the event of any issue arising here after about this work, we shall be personally responsible.

It is further certified that this work has not been submitted, either in part of in full, to any other department of the Jawaharlal Nehru Technological University Kakinada, or any other University, Institution or elsewhere, in India or abroad or for publication in any form.

Signature of the Student(s)

K. Padmaja	23555A0507
P. Nagesh Varma	23555A0512
Y. Tanmai Sairam	22551A05J8

ACKNOWLEDGEMENT

We feel immense pleasure to express our sincere thanks and profound sense of gratitude to all those people who played a valuable role for the successful completion of our project.

We would like to express our gratitude to **Dr. K.V.V. SATYANARAYANA RAJU**, Chairman, Chaitanya Group of Institutions, **Sri. K. SASI KIRAN VARMA**, Vice Chairman, GIET Group of Institutions for providing necessary infrastructure.

We are thankful to **Dr. T. JAYANANDA KUMAR,** Principal for permitting and encouraging us for doing this project.

Our special thanks to **Dr. N. LEELAVATHY,** Vice Principal (Academics) for their content guidance and motivation and for providing an excellent environment. We are truly grateful for her valuable suggestions and advice.

We would like to express our gratefulness to **Dr. B. SUJATHA**, Professor, and Head of the Department, Computer Science and Engineering for giving constant encouragement and moral support.

We feeling grateful to express my deep sense of gratitude and respect towards our supervisor **Mr. T. SRIDHAR REDDY**, Assistant Professor, whose motivation and constant encouragement have led to pursue a project in the field of (Domain). We are very fortunate, for having his gracious presence to enlighten us in all the aspects of life as well as project and transforming us to be an ideal individual in this field.

K. PADMAJA **P. NAGESH VARMA** **Y. TANMAI SAIRAM**

TABLE OF CONTENTS

DECLARATION **i**

BONAFIDE CERTIFICATE **ii**

CERTIFICATE OF AUTHENTICATION **iii**

ACKNOWLEDGEMENTS **iv**

TABLE OF CONTENTS **v**

LIST OF TABLES **viii**

LIST OF FIGURES **ix**

LIST OF ABBREVIATIONS **x**

ABSTRACT **xi**

CHAPTER-1- INTRODUCTION **1**

1.1 Problem Statement 2

1.2 Objectives 2

1.3 Scope of the project 3

1.4 Technologies used 5

1.5 Statistical Analysis 5

1.6 Machine Learning Models 6

1.6.1 Linear Regression 6

1.6.2 ARIMA 6

1.6.3 LSTM 6

1.6.4 Difference between ARIMA & LSTM 7

1.7 Research objective 7

CHAPTER-2 - LITERATURE REVIEW **8**

2.1 Overview 8

CHAPTER-3 - SYSTEM STUDY AND FEASIBILITY ANALYSIS **10**

3.1 System study 10

3.2 UML diagrams 10

3.2.1 Activity diagram 11

3.2.2 Sequence diagram 12
3.2.3 Class diagram 13
3.2.4 Use case diagram 14
3.2.5 ER diagram 15
3.2.6 Deployment diagram 16
3.2.7 Component diagram 16
CHAPTER-4 - RESEARCH METHODOLOGY 18
4.1 Existing system 18
4.1.1 Challenges in existing system 18
4.2 Proposed system 19
4.2.1 Data Sources for Ozone Analysis 20
4.2.2 Machine Learning Models Used 21
4.2.3 Role of Statistical Analysis 21
4.2.4 Why Machine Learning is used? 22
4.2.5 Data Visualization Techniques 22
4.2.6 System Workflow 23
4.2.7 Improvements in proposed system 23
4.3 Implementation 23
4.3.1 Data collection & preprocessing 24
4.3.2 Ozone Data Analysis 25
4.3.3 Model training & optimization 25
4.3.4 Model evaluation 25
4.3.5 Real-World Applications 25
4.4 Requirements of hardware & software 27
4.4.1 Hardware requirements 27
4.4.2 Software requirements 28
CHAPTER-5: SYSTEM ARCHITECTURE 29
5.1 Layered architecture overview 32
5.2 Advantages of the architecture 33

5.3 Future enhancements 33

CHAPTER-6: RESULT AND DISCUSSION 34

6.1 Result analysis 34

6.1.1 Model performance analysis 34

6.1.2 Confusion matrix 38

6.2 Output images 40

CHAPTER-7: CONCLUSIONS AND FUTURE SCOPE 43

7.1 Conclusion 43

7.2 Future scope 45

REFERENCES 46

INDIVIDUAL CONFERENCE CERTIFICATES 48

LIST OF TABLES

Table No	Name of The Table	Page. No
Table 1	Description of hardware requirements	26
Table 2	Description of software requirements	26

LIST OF FIGURES

Figure No	Name of The Figure	Page. No
Figure 1	Statistical Analysis Workflow	6
Figure 2	Activity diagram	11
Figure 3	Sequence diagram	12
Figure 4	Class diagram	13
Figure 5	Use Case diagram	14
Figure 6	ER diagram	14
Figure 7	Deployment diagram	15
Figure 8	Component diagram	16
Figure 9	Workflow of the Proposed Ozone Analysis System	22
Figure 10	Implementation Flow	23
Figure 11	Block diagram of the proposed system	28
Figure 12	ARIMA ROC Curve	30
Figure 13	LSTM ROC Curve	31
Figure 14	LinearRegression ROC Curve	31
Figure 15	Confusion Matrix	33
Figure 16	Home page	34
Figure 17	CFC Emission vs Ozone Concentration	34
Figure 18	Time Series & Model Performance Comparison	35
Figure 19	Heat Map, High & Low Depletion Years	35
Figure 20	Temporal Animation over the years	36
Figure 21	Advisory & Suggestions	36

LIST OF ABBREVIATIONS

UV	Ultraviolet
CFCs	Chlorofluorocarbons
NOx	Nitrogen Oxides
VOCs	Volatile Organic Compounds
CPCB	Central Pollution Control Board
CSE	Centre for Science and Environment
NASA OMI	NASA Ozone Monitoring Instrument
Sentinel-5P	Sentinel-5 Precursor
ERA5	ECMWF Reanalysis v5 (European Centre for Medium-Range Weather Forecasts)
TROPOMI	Tropospheric Monitoring Instrument
ENSO	El Niño–Southern Oscillation
QBO	Quasi-Biennial Oscillation
TCO	Total Column Ozone
NO_2	Nitrogen Dioxide
HCHO	Formaldehyde
ARIMA	Auto-Regressive Integrated Moving Average
LSTM	Long Short-Term Memory
STL	Seasonal-Trend decomposition using Loess
UML	Unified Modeling Language
ER	Entity-Relationship

ABSTRACT

The ozone layer plays a crucial role in shielding life on Earth from harmful ultraviolet (UV) radiation. However, increasing industrial activity has led to the emission of ozone-depleting substances (ODS), particularly chlorofluorocarbons (CFCs), which contribute significantly to ozone layer degradation. This project aims to analyze the climatological trends of ozone layer depletion over the past three years (2022-2025) in a selected industrial region of India by studying the variations in CFC emissions. Using publicly available datasets from sources such as NASA's Ozone Monitoring Instrument (OMI), Sentinel-5P, and the Central Pollution Control Board (CPCB), we collect and preprocess ozone concentration and CFC-level data specific to the chosen region. Machine learning models such as Linear Regression, ARIMA, and LSTM are employed to identify temporal patterns, forecast ozone concentration, and determine the correlation between industrial gas emissions and ozone depletion. Visualizations, including year-wise graphs and heatmaps, illustrate the impact of rising CFC levels on ozone thinning. The project not only highlights the environmental consequences of unchecked industrial emissions but also provides predictive insights for future ozone conditions. This study supports informed decision-making for environmental policy and industrial regulation aimed at protecting the ozone layer and mitigating climate change

CHAPTER - 1

INTRODUCTION

The ozone layer is one of Earth's most vital protective shields, filtering out harmful ultraviolet (UV) radiation from the sun. Without it, life on our planet would face severe consequences, ranging from increased skin cancers and eye damage in humans to reduced crop yields and ecosystem instability. Over the past few decades, scientists have observed that human activities, particularly the release of ozone-depleting substances, have weakened this protective layer. While international agreements such as the Montreal Protocol have successfully reduced global emissions of chlorofluorocarbons (CFCs), localized industrial emissions continue to pose challenges, especially in rapidly developing countries like India. India's industrial growth has been accompanied by rising emissions of nitrogen oxides (NOx), volatile organic compounds (VOCs), halogenated solvents, and aerosols. These pollutants interact with atmospheric chemistry, contributing to both ozone depletion in the stratosphere and ozone formation at ground level. Stratospheric ozone depletion increases UV exposure, while ground-level ozone acts as a harmful pollutant, affecting human health and agriculture. This dual impact makes ozone monitoring in industrial regions a critical environmental and public health priority.

Previous studies have highlighted the severity of ozone pollution in Indian cities. For example, research in Delhi has shown that VOC emissions from industrial solvents are a major driver of ozone formation, while studies in Madhya Pradesh have linked NOx emissions to strong diurnal ozone variability. Reports from the Central Pollution Control Board (CPCB) and the Centre for Science and Environment (CSE) confirm that ozone levels in cities such as Delhi and Pune frequently exceed national safety standards, with persistent nighttime ozone levels worsening exposure risks.

Despite these findings, most earlier studies relied on descriptive analysis rather than predictive modeling. This limited the ability of policymakers to anticipate future ozone trends and design effective interventions. To address this gap, the present project integrates satellite data (NASA OMI, Sentinel-5P/TROPOMI), ground-based monitoring (CPCB), and climate reanalysis datasets (ERA5). By combining statistical methods with advanced machine learning models such as ARIMA and LSTM, the study aims to forecast ozone depletion patterns and provide actionable insights for environmental governance.

The focus of this project is on industrial clusters in India, particularly Delhi NCR, Gujarat,

and the Odisha-Jharkhand coal belt. These regions represent hotspots of industrial activity and emissions, making them critical areas for ozone monitoring. The study not only examines long-term trends but also considers seasonal variations, such as the heightened depletion observed during pre-monsoon months when solar radiation intensifies photochemical reactions. Additionally, the influence of climatic factors like ENSO, QBO, and monsoon cycles is analyzed to avoid misattribution of ozone changes solely to industrial emissions.

Ultimately, this project underscores the importance of integrating science, technology, and policy to safeguard the ozone layer. By leveraging machine learning forecasts and multi-source datasets, the study provides a proactive framework for monitoring ozone depletion in India's industrial regions. The insights gained can guide policymakers in implementing stricter emission controls, expanding monitoring networks, and developing early warning systems to protect both public health and agricultural productivity.

1.1. PROBLEM STATEMENT

The ozone layer, which protects life on Earth from harmful ultraviolet (UV) radiation, is facing persistent depletion in India's industrial regions despite global recovery efforts under the Montreal Protocol. Rapid industrialization has led to rising emissions of NOx, VOCs, halogenated solvents, and CFCs, which accelerate stratospheric ozone loss while also contributing to harmful ground-level ozone formation. Current monitoring systems, such as those operated by the Central Pollution Control Board (CPCB), provide valuable data but are limited in coverage and rely mainly on descriptive analysis, leaving policymakers without reliable forecasting tools. Moreover, natural climatic factors like ENSO, QBO, and monsoon cycles further complicate attribution, making it difficult to distinguish between industrial and natural influences on ozone variability. The absence of a predictive, data-driven framework is the core issue, as India lacks proactive tools to forecast ozone depletion, issue early warnings, and design effective mitigation strategies. This project addresses that gap by integrating satellite data, ground monitoring, and climate reanalysis with advanced statistical and machine learning models to provide actionable intelligence for environmental governance and public health protection.

1.2. OBJECTIVES

- Analyze spatial distribution of total column ozone (TCO) across India's industrial regions, identifying areas most affected by depletion. This helps in mapping ozone hotspots and

understanding regional variations caused by industrial activity.

- Study seasonal cycles of ozone variation, focusing on pre-monsoon and monsoon periods. Seasonal analysis reveals how natural cycles and solar radiation influence ozone depletion patterns.
- Forecast ozone depletion trends from 2005 to 2025 using statistical and machine learning models. Predictive modeling provides insights into future ozone levels and supports proactive environmental planning.
- Correlate industrial emissions (NO_2, VOCs, HCHO, CFCs) with ozone thinning to establish direct links. This identifies critical pollutants and regions where industrial activity contributes most to ozone loss.
- Evaluate climatic influences such as ENSO, QBO, and monsoon indices on ozone variability. Understanding these factors helps separate natural variability from human-induced changes.
- Develop predictive models including Linear Regression, ARIMA, and LSTM for accurate forecasting. These models allow comparison of short-term and long-term ozone trends with varying precision.
- Visualize findings through heatmaps, anomaly plots, and time-series graphs for clear communication. Effective visualization makes complex data accessible to policymakers and researchers.
- Provide policy support by generating actionable insights for governance, health, and agriculture. The outcomes guide emission control strategies, public health protection, and sustainable farming practices.

1.3. SCOPE OF THE PROJECT

The scope of this project is to provide a comprehensive framework for analyzing and forecasting ozone depletion in India's industrial regions. It focuses on five main aspects: covering major industrial clusters like Delhi NCR, Gujarat, and the Odisha-Jharkhand coal belt; examining ozone trends from 2005 to 2025 to capture both long-term and seasonal variations; applying statistical tools and machine learning models such as Linear Regression, ARIMA, and LSTM for accurate forecasting; generating actionable insights to support emission control, public health, and agriculture; and presenting results through clear visualizations like heatmaps, anomaly plots, and time-series graphs to make findings accessible to policymakers and researchers.

- **Geographical Coverage** - Focuses on major industrial clusters such as Delhi NCR, Gujarat, and the Odisha-Jharkhand coal belt, where emissions are most concentrated.
- **Temporal Range** - Examines ozone trends from 2005 to 2025, capturing both long-term changes and seasonal variations.
- **Methodological Approach** - Utilizes statistical tools (Mann-Kendall, Sen's slope) and machine learning models (Linear Regression, ARIMA, LSTM) for accurate forecasting.
- **Policy and Impact Assessment** - Provides actionable insights to support emission control strategies, public health protection, and agricultural sustainability.
- **Visualization and Communication** - Delivers clear outputs such as heatmaps, anomaly plots, and time-series graphs to make findings accessible to policymakers and researchers.
- **Multi-Scale Spatial Coverage** – In addition to major industrial clusters, the framework incorporates regional and local-scale analysis, enabling comparisons between urban centers, industrial belts, and rural surroundings to highlight disparities in ozone depletion.
- **Cross-Sectoral Impact Assessment** – The system evaluates how ozone depletion influences not only public health but also agriculture (crop yield reduction due to increased UV radiation) and climate resilience, ensuring a holistic understanding of environmental consequences.
- **Integration of Policy and Regulatory Data** – By linking ozone trends with industrial emission records, compliance reports, and regulatory frameworks, the project supports evidence-based policymaking and enforcement of emission control standards.
- **Scenario-Based Forecasting** – The framework includes simulations under different industrial growth and emission reduction scenarios, allowing policymakers to assess potential outcomes of interventions and plan long-term strategies.
- **Stakeholder-Oriented Visualization** – Beyond technical plots, the system generates tailored dashboards for different audiences: policymakers receive actionable summaries, researchers access detailed analytics, and the public gains simplified visualizations for awareness.
- **Scalability and Replicability** – While focused on India's industrial regions, the framework is designed to be adaptable to other countries and contexts, promoting international collaboration in ozone monitoring and protection.
- **Capacity for Real-Time Alerts** – With continuous data ingestion pipelines, the system can evolve into a real-time monitoring tool, issuing predictive alerts to environmental agencies when ozone levels approach critical thresholds.

1.4. TECHNOLOGIES USED

The project makes use of modern programming tools, machine learning frameworks, and visualization techniques to analyze and forecast ozone depletion patterns. The key technologies applied are:

- **Programming Language - Python** Python is the primary language used for data processing, statistical analysis, and implementing machine learning models due to its flexibility and extensive scientific libraries.
- **Machine Learning Frameworks - TensorFlow/Keras, Scikit-learn, Statsmodels** TensorFlow/Keras is used to build and train LSTM models for long-term forecasting, while Scikit-learn and Statsmodels are applied for ARIMA and regression models.
- **Data Processing Libraries - Pandas, NumPy, SciPy** These libraries handle data cleaning, preprocessing, and trend analysis, ensuring consistency and accuracy in large datasets from satellites and ground stations.
- **Visualization Tools - Matplotlib, Seaborn** Heatmaps, anomaly plots, and time-series graphs are generated to clearly present ozone depletion trends and industrial hotspots.
- **Datasets - Satellite (NASA OMI, Sentinel-5P/TROPOMI), Ground (CPCB), Climate (ERA5)** Multi-source datasets provide comprehensive coverage of ozone levels, industrial emissions, and climatic influences, ensuring robust analysis and forecasting.

1.5. Statistical Analysis

Statistical analysis forms the foundation of this project, enabling the identification of long-term ozone depletion trends and seasonal variations. Techniques such as the Mann-Kendall Test are used to detect monotonic changes, while Sen's Slope Estimator quantifies the rate of depletion. Seasonal decomposition methods (STL) further separate natural cycles from industrial influences, ensuring accurate attribution of ozone variability. Advanced regression models and machine learning approaches complement these methods, enhancing predictive accuracy. Together, these techniques provide a robust framework for policy-relevant insights and scientific decision-making.

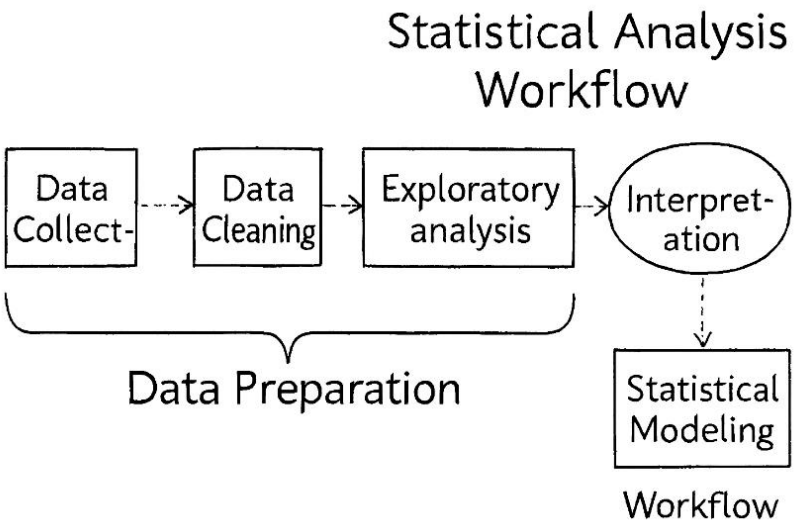

Figure 1. Statistical Analysis Workflow

Statistical analysis forms the foundation of this project, enabling the identification of long-term ozone depletion trends and seasonal variations. Techniques such as the Mann-Kendall Test are used to detect monotonic changes, while Sen's Slope Estimator quantifies the rate of depletion. Seasonal decomposition methods (STL) further separate natural cycles from industrial influences, ensuring accurate attribution of ozone variability.

1.6 Machine Learning Models

Machine learning models are employed to forecast ozone depletion patterns with greater accuracy. These models capture both linear and non-linear relationships between industrial emissions, climate factors, and ozone levels. By comparing different approaches, the project identifies the most effective forecasting techniques for short-term and long-term predictions.

1.6.1 Linear Regression

Linear Regression provides a simple baseline model for detecting linear relationships between industrial emissions and ozone depletion. While limited in handling complex variations, it establishes a foundational trend analysis.

1.6.2 ARIMA (Auto-Regressive Integrated Moving Average)

ARIMA is effective for short-term forecasting, particularly in capturing seasonal cycles and temporal dependencies. It models ozone variability over limited periods, offering medium accuracy and reliability.

1.6.3 LSTM (Long Short-Term Memory Networks)

LSTM networks excel at handling long-term dependencies and non-linear variations in

ozone data. They outperform other models in predictive accuracy, making them the most suitable for anomaly detection and long-term forecasting.

1.6.4 Difference Between ARIMA & LSTM

The primary difference lies in their forecasting capabilities. ARIMA is best suited for short-term seasonal predictions, relying on linear time-series patterns. In contrast, LSTM captures complex, non-linear relationships and long-term dependencies, providing higher accuracy and robustness in forecasting ozone depletion trends.

1.7 Research Objective

The primary objective of this research is to develop a robust and predictive framework for analyzing ozone depletion over India's industrial regions by integrating satellite data, ground-based monitoring, and climate reanalysis datasets with advanced statistical and machine learning models. The study aims to accurately forecast ozone depletion trends between 2005 and 2025, identify critical industrial hotspots contributing to ozone loss, and evaluate the influence of climatic factors such as ENSO, QBO, and monsoon cycles. By leveraging models like Linear Regression, ARIMA, and LSTM, the project seeks to provide reliable short-term and long-term predictions, enabling proactive environmental governance. Furthermore, the research emphasizes visualization and policy support, ensuring that findings are communicated effectively through heatmaps, anomaly plots, and time-series graphs, thereby offering actionable insights for emission control, public health protection, and agricultural sustainability. Ultimately, this work aspires to bridge the gap between descriptive ozone studies and predictive intelligence, contributing to stronger environmental monitoring and policymaking in India's industrial region.

CHAPTER - 2

LITERATURE REVIEW

OVERVIEW

Understanding ozone depletion and its forecasting in the Indian context requires a multidisciplinary approach that integrates atmospheric science, environmental monitoring, and data-driven modeling. The literature reveals that ozone, a vital component of the stratosphere, plays a critical role in shielding life on Earth from harmful ultraviolet radiation. However, anthropogenic activities—especially industrial emissions—have significantly contributed to its degradation. Studies such as those by Dr. Avani Pareek et al. emphasize the seasonal and regional variability of ozone thickness, noting that human-induced factors like chlorofluorocarbons (CFCs), nitrogen oxides (NOx), and volatile organic compounds (VOCs) are major contributors to ozone layer thinning.

In India, rapid industrialization has led to increased surface ozone concentrations in urban and industrial hotspots. Research by Keerthi Lakshmi et al. provides a comprehensive review of surface ozone variations across several Indian regions, including Delhi NCR, Mumbai, and Ahmedabad. These studies highlight the dual nature of ozone—while stratospheric ozone protects life, ground-level ozone acts as a pollutant, affecting respiratory health and crop yields. The literature also underscores the complexity of ozone dynamics, influenced not only by emissions but also by meteorological factors such as temperature, humidity, and wind patterns.

Forecasting ozone levels has evolved from basic statistical methods to sophisticated machine learning approaches. Traditional models like linear regression and ARIMA have been used to identify trends and seasonal patterns. However, recent advancements favor deep learning models such as Long Short-Term Memory (LSTM) networks, which can capture non-linear dependencies and long-term temporal relationships. These models have shown promise in improving the accuracy of ozone forecasts, especially when integrated with satellite data and climate indices like ENSO and QBO.

Furthermore, the literature identifies gaps in India's current ozone monitoring infrastructure. While descriptive analyses are common, there is a lack of predictive frameworks that can issue early warnings and guide mitigation strategies. This gap underscores the need for data-driven approaches that not only analyze historical trends but also forecast future scenarios.

The reviewed studies advocate for the adoption of machine learning and AI-based models to enhance forecasting capabilities and support environmental governance.

In summary, the literature provides a strong foundation for understanding ozone depletion in India, highlighting the interplay between industrial emissions, climatic factors, and technological advancements in forecasting. It also points to the urgent need for integrated, predictive systems that can translate scientific insights into actionable policies. This project builds upon these findings by proposing a comprehensive framework that combines statistical analysis, machine learning, and multi-source data integration to forecast ozone depletion and support sustainable development.

In addition to the foundational studies on ozone depletion and forecasting, recent literature has explored the integration of artificial intelligence and remote sensing technologies to enhance predictive capabilities. Researchers have demonstrated that combining satellite-derived ozone data with machine learning algorithms significantly improves the accuracy of forecasts. For instance, studies using Sentinel-5P and TROPOMI data have shown that high-resolution spatial and temporal ozone measurements can be effectively modeled using LSTM networks, which outperform traditional statistical methods in capturing complex patterns. Moreover, the literature emphasizes the importance of feature engineering—selecting relevant variables such as NO_2, HCHO, temperature, and wind speed—to train robust models. These approaches not only improve prediction accuracy but also help in identifying the most influential factors driving ozone depletion in specific regions.

Another emerging theme in the literature is the role of climate variability in modulating ozone levels. Studies have shown that phenomena like the El Niño-Southern Oscillation (ENSO) and the Quasi-Biennial Oscillation (QBO) can significantly alter stratospheric circulation, affecting ozone distribution. Research by Indian and international climatologists has highlighted how monsoon dynamics interact with industrial emissions to create unique ozone patterns in South Asia. These findings underscore the need for hybrid models that incorporate both anthropogenic and natural variables. The literature also calls for improved data assimilation techniques and real-time monitoring systems to support early warning mechanisms. Overall, the reviewed studies advocate for a multidisciplinary, data-driven approach to ozone forecasting—one that combines atmospheric science, machine learning, and policy-oriented visualization tools to address the environmental and health challenges posed by ozone depletion.

CHAPTER - 3

SYSTEM STUDY AND FEASIBILITY ANALYSIS

3.1. SYSTEM STUDY

The system study for this project focuses on understanding the existing frameworks, data sources, and analytical methods used in ozone depletion monitoring and forecasting, while identifying gaps that necessitate the development of a more comprehensive predictive system. At present, India relies heavily on descriptive monitoring through the Central Pollution Control Board (CPCB) and satellite-based observations from instruments such as NASA's OMI and ESA's Sentinel-5P/TROPOMI. These systems provide valuable datasets on ozone levels and precursor gases but lack integrated forecasting capabilities. The current infrastructure is primarily designed for real-time monitoring rather than predictive modeling, which limits its ability to issue early warnings or guide proactive policy interventions.

The proposed system builds upon these existing resources by integrating multi-source datasets (satellite, ground-based, and climate reanalysis) with advanced statistical and machine learning models. The workflow begins with data acquisition, where ozone concentration, industrial emissions, and climatic indices are collected. Next, statistical tests such as the Mann-Kendall and Sen's slope estimators are applied to detect long-term trends and quantify the rate of depletion. The system then incorporates machine learning models - Linear Regression, ARIMA, and LSTM to forecast ozone levels with varying degrees of accuracy and complexity. Finally, the results are visualized through heatmaps, anomaly plots, and time-series graphs, making them accessible to policymakers, researchers, and environmental agencies.

The system study also emphasizes the importance of correlation analysis, linking industrial emissions (NO_2, VOCs, HCHO, CFCs) with ozone depletion patterns. This step ensures that the predictive framework not only identifies trends but also attributes them to specific causes, thereby enhancing its utility for governance and public health. By combining descriptive monitoring with predictive intelligence, the proposed system addresses the limitations of current approaches and provides a holistic solution for ozone depletion forecasting in India.

3.2 UML DIAGRAMS

The use case diagram illustrates the interaction between actors (such as researchers, policymakers, and monitoring agencies) and the system. It highlights functionalities like data

acquisition, preprocessing, statistical analysis, machine learning forecasting, and visualization outputs. This diagram ensures that all stakeholders' requirements are captured and addressed.

3.2.1 ACTIVITY DIAGRAM

This activity diagram outlines the step-by-step workflow of the proposed ozone depletion forecasting system. The process begins with Data Acquisition, where satellite, ground-based, and climate datasets are collected. These inputs are then passed to the Preprocessing stage, which involves cleaning, gridding, and seasonal decomposition to prepare the data for analysis. Next, the system performs Statistical Analysis using techniques like

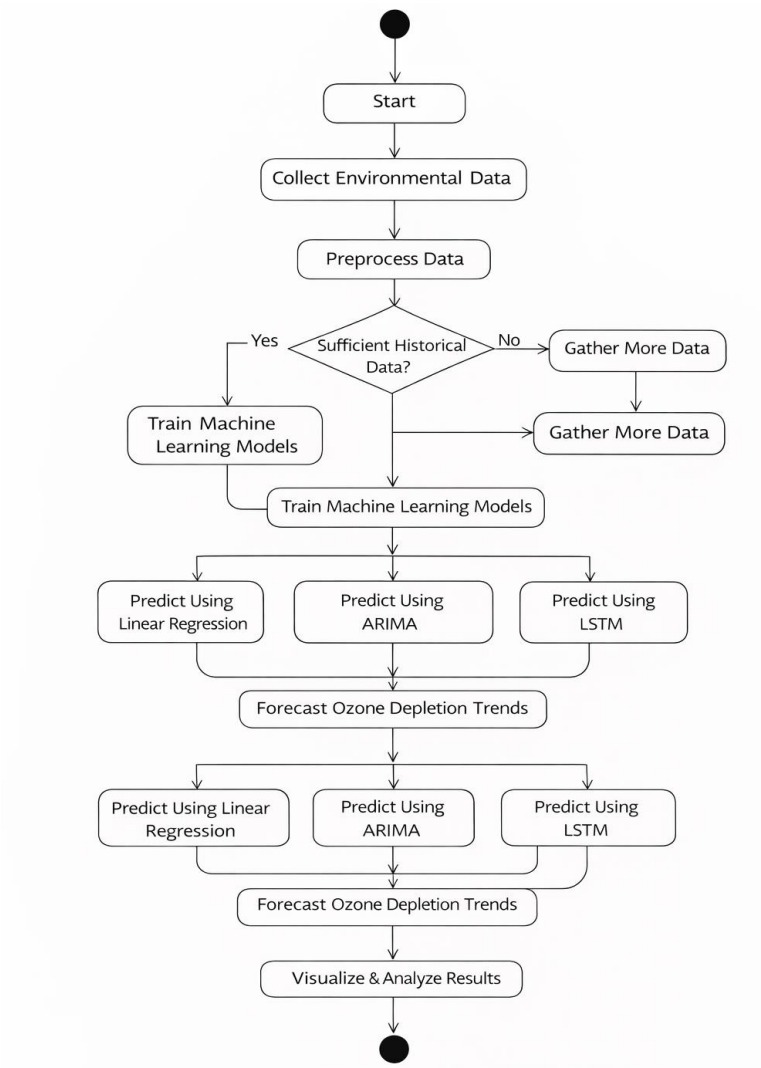

Figure.2 Activity diagram

the Mann-Kendall Test and Sen's Slope Estimator to detect trends and quantify ozone depletion rates. The processed data is then fed into the Machine Learning Forecasting module, where models such as Linear Regression, ARIMA, and LSTM are used to predict

future ozone levels. Finally, the results are visualized through heatmaps, anomaly plots, and time-series graphs, providing actionable insights for researchers and policymakers.

3.2.2 SEQUENCE DIAGRAM

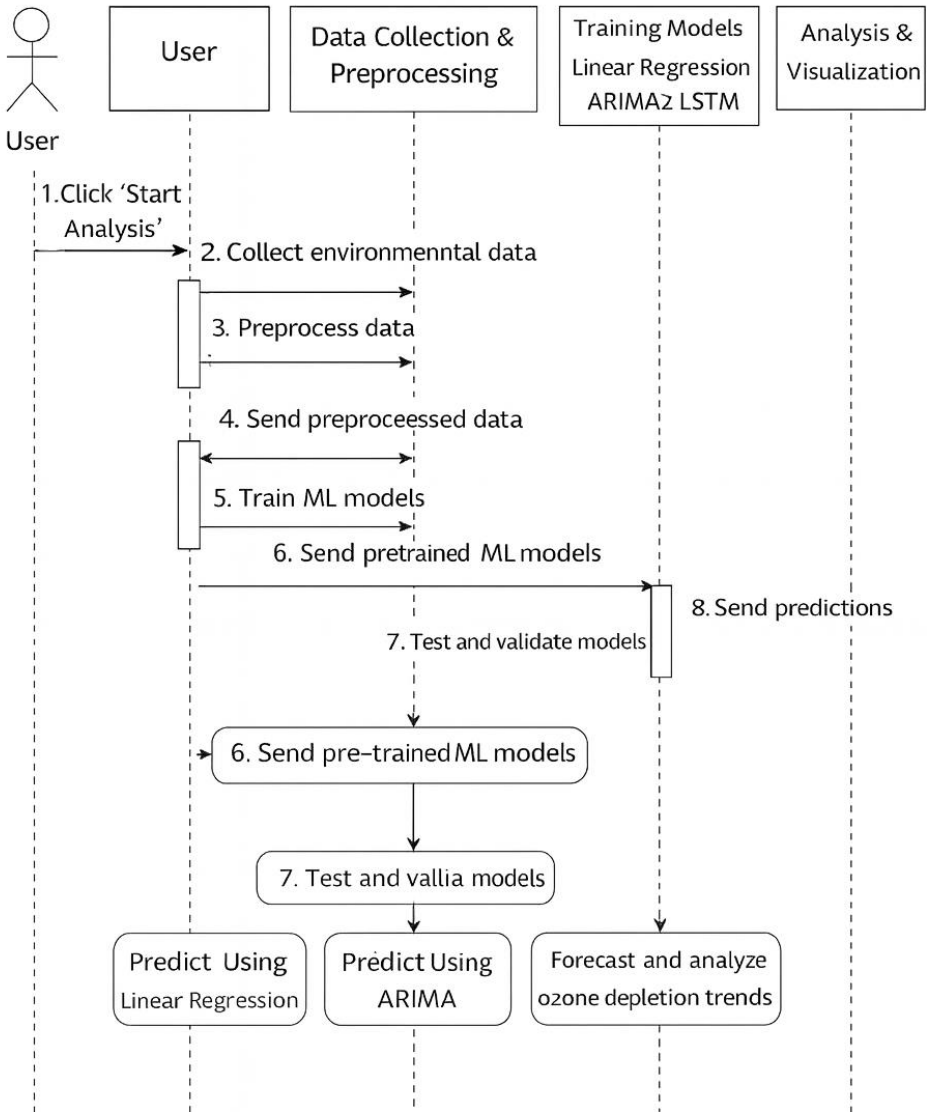

Figure.3 Sequence diagram

The sequence diagram for the ozone depletion forecasting system illustrates the linear interaction between its core components. The process begins with the User initiating a request, which is handled by the InputHandler that performs initial preprocessing. The cleaned data is then passed to the DataCollector, which aggregates satellite, ground-based, and climate datasets. This data flows into the Preprocessor, where seasonal decomposition and gridding are applied. The refined data is sent to the StatisticalAnalyzer for trend

detection using methods like the Mann-Kendall Test and Sen's Slope Estimator, while simultaneously being forwarded to the MLModel module for forecasting using Linear Regression, ARIMA, and LSTM. The outputs from both analytical paths are then passed to the Visualizer, which generates heatmaps, anomaly plots, and time-series graphs. Finally, the OutputHandler delivers the visualized results back to the User, completing the sequence and enabling informed decision-making.

3.2.3 CLASS DIAGRAM

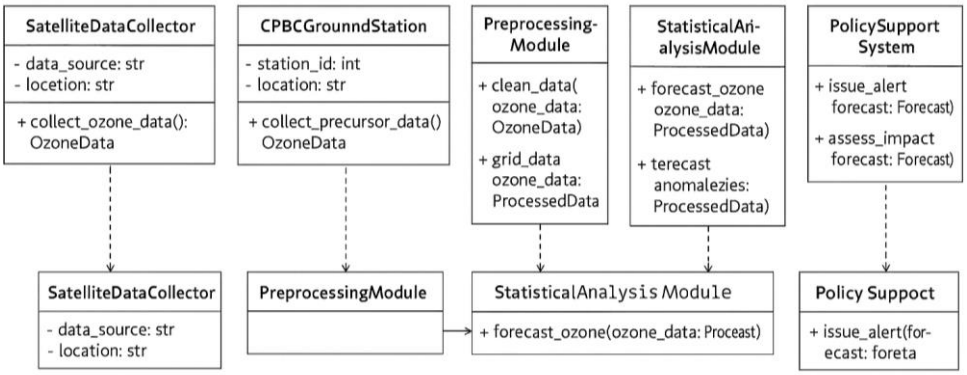

Figure.4 Class diagram

The class diagram for the ozone depletion forecasting system represents the structural design of the system by outlining its major classes, attributes, and methods, along with their relationships. At the top level, the User class interacts with the system through methods such as requestForecast () and viewResults (). The InputHandler class manages incoming data with attributes like raw data and methods such as captureInput () and preprocessInput (). The DataCollector class aggregates information from multiple sources, including satellite, ground-based, and climate datasets, using methods like collectSatelliteData () and collectGroundData ().

The Preprocessor class prepares the data for analysis with attributes such as cleaned Data and seasonal Components, and methods like cleanData () and applySeasonalDecomposition (). The StatisticalAnalyzer class performs trend detection using attributes like trendSlope and methods such as runMannKendall () and calculateSenSlope (). Parallel to this, the MLModel class handles forecasting tasks with attributes like modelType and forecast Results, and methods including trainModel () and predictOzoneLevels (). The Visualizer class generates outputs with attributes such as graphs and heatmaps, and methods like

generateTimeSeriesPlot () and createAnomalyMap (). Finally, the OutputHandler class delivers results to the user, with attributes like finalReport and methods such as displayResults ().

3.2.4 USE CASE DIAGRAM

The use case diagram for the ozone depletion forecasting system illustrates the interaction between external actors and the system's core functionalities. The primary actors include the Researcher, Policymaker, and Monitoring Agency. The Researcher interacts with the system to perform tasks such as Data Acquisition, Preprocessing, Statistical Analysis, Machine Learning Forecasting, and Visualization Outputs, enabling them to study ozone trends and validate models.

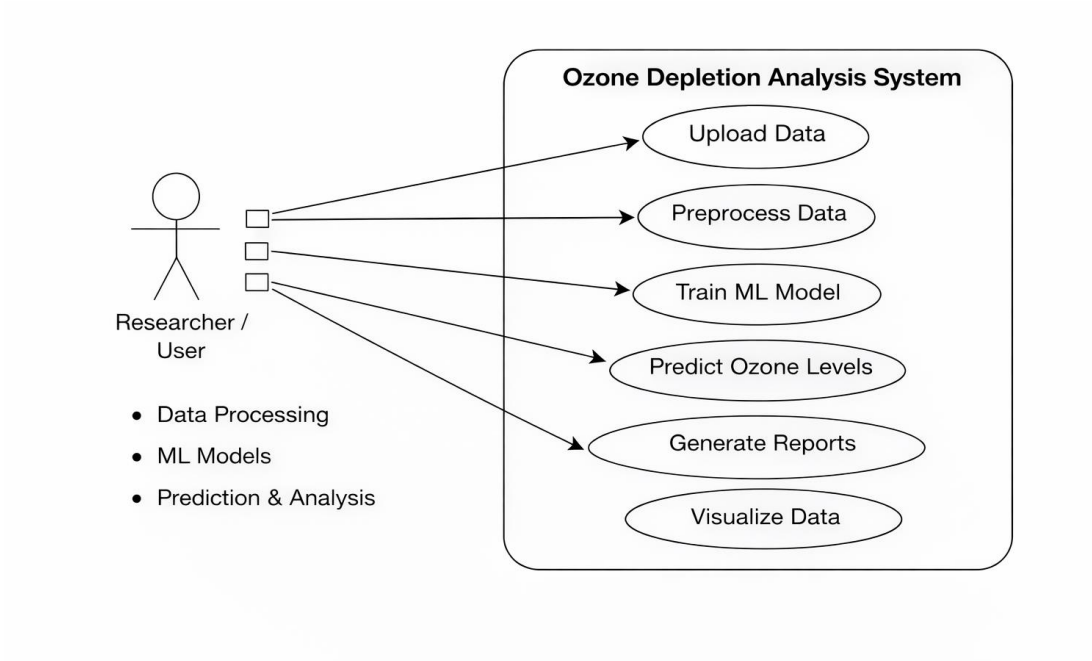

Figure.5 Use Case diagram

The Policymaker engages with the system through Visualization Outputs and Policy Support, using the insights generated to make informed environmental decisions. The Monitoring Agency contributes by providing raw datasets through the Data Acquisition use case, ensuring that the system has reliable inputs.

3.2.5 ER DIAGRAM

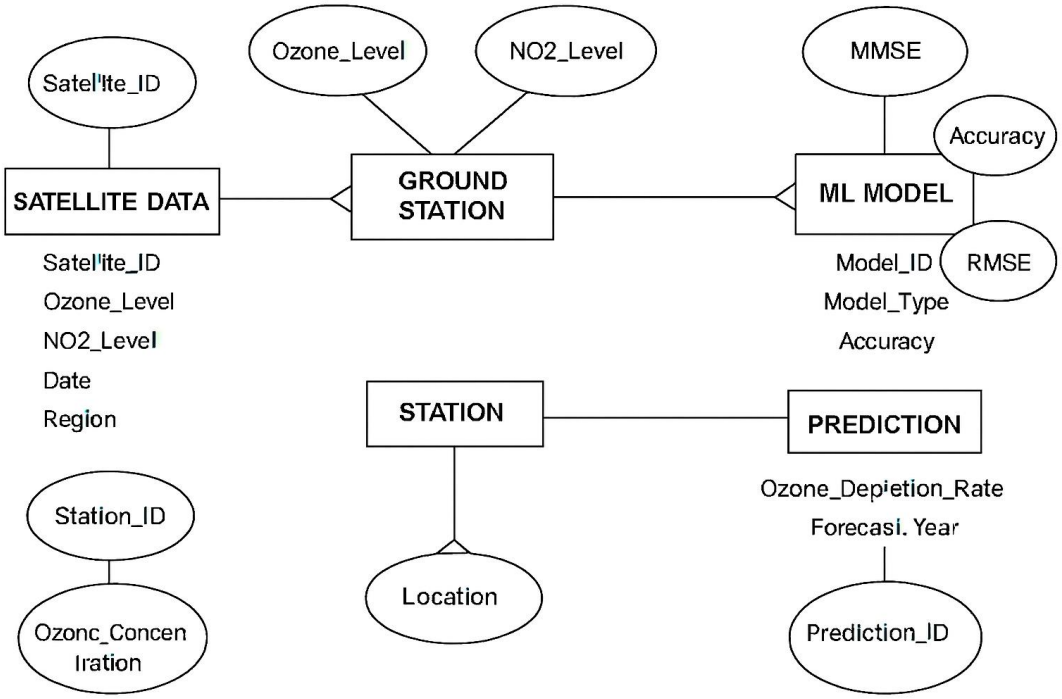

Figure.6 ER diagram

The ER diagram for the ozone depletion forecasting system represents the logical flow of data and the relationships among its entities in a single structured view. The User entity initiates the process by providing input data, which is captured by the Input entity containing attributes such as FilePath, FileType, and RawData. This input is transformed into the Preprocessed_Data entity, storing CleanedData and SeasonalComponents. The preprocessed data connects to both the Statistical_Analysis entity, which holds attributes like TrendSlope and TestResults, and the ML_Model entity, which includes ModelType, ForecastResults, and AccuracyScore. Outputs from these analytical entities are compiled into the Visualization entity, containing Graphs, Heatmaps, and Anomaly Plots. Finally, the Results entity aggregates all outputs and links back to the User, presenting the final forecasts and insights. This ER diagram highlights the structured progression from raw input to processed data, analysis, forecasting, visualization, and delivery, ensuring a comprehensive and connected workflow for ozone depletion prediction.

3.2.6 DEPLOYMENT DIAGRAM



Figure.7 Deployment diagram

The deployment diagram for the ozone depletion forecasting system shows how software components are distributed across hardware nodes to ensure efficient execution. The User Node (desktop or mobile device) connects through a web interface to the Application Server Node, which hosts the main modules such as InputHandler, Preprocessor, StatisticalAnalyzer, MLModel, and Visualizer. The Database Server Node stores raw datasets, preprocessed data, statistical outputs, and machine learning forecasts, while the Data Source Node represents external feeds like satellite data, ground-based monitoring stations, and climate repositories. Finally, the OutputHandler delivers processed results back to the User Node. This diagram highlights a distributed architecture where external data sources feed into centralized servers for processing, and results are seamlessly delivered to end users.

3.2.7 COMPONENT DIAGRAM

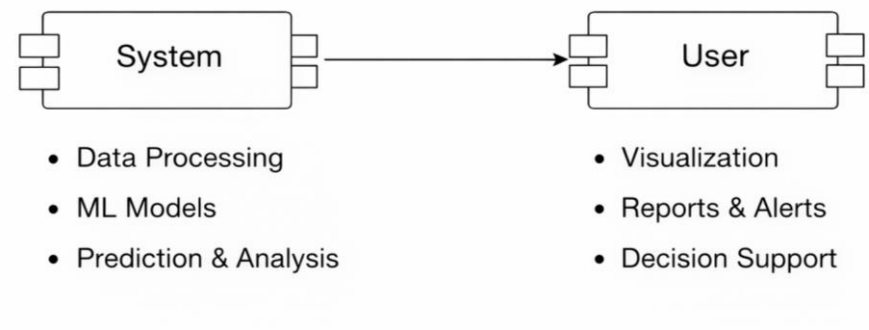

Figure.8 Component diagram

The component diagram for the ozone depletion forecasting system illustrates the organization and interconnection of the system's functional modules. At the core, the InputHandler Component manages raw datasets from satellite feeds, ground-based monitoring stations, and climate repositories. This connects to the Preprocessor Component, which performs cleaning, gridding, and seasonal decomposition to prepare the data. The

StatisticalAnalyzer Component is responsible for trend detection using methods such as the Mann-Kendall Test and Sen's Slope Estimator, while the MLModel Component handles forecasting tasks with models like Linear Regression, ARIMA, and LSTM. Both analytical components feed into the Visualizer Component, which generates outputs such as heatmaps, anomaly plots, and time-series graphs. Finally, the OutputHandler Component compiles and delivers the results to the User Interface Component, ensuring accessibility for researchers and policymakers. This diagram highlights modularity and clear separation of responsibilities, showing how each component contributes to the overall functionality of the forecasting system.

CHAPTER - 4

RESEARCH METHODOLOGY

4.1 EXISTING SYSTEM

Current environmental monitoring systems for ozone layer analysis primarily rely on satellite observations and ground-based monitoring stations. Agencies and environmental organizations use data from satellites and atmospheric sensors to measure Total Column Ozone (TCO) levels and monitor variations over time. In India, most ozone observations are obtained through monitoring networks and satellite sensors which provide atmospheric data related to ozone concentration and industrial emissions. These traditional systems mainly focus on observational monitoring and statistical analysis rather than predictive modelling. Researchers often analyze historical ozone concentration data to identify seasonal patterns, correlations with industrial emissions, and long-term environmental changes. Tools such as trend analysis, correlation analysis, and seasonal decomposition are commonly used to interpret atmospheric variations. Although these approaches provide valuable insights into ozone fluctuations, they have several limitations. Most existing monitoring systems do not incorporate advanced machine learning models capable of predicting future ozone depletion trends. Additionally, the available monitoring infrastructure in many industrial regions is limited, which restricts the spatial coverage and accuracy of environmental analysis. Furthermore, conventional systems struggle to combine multiple environmental datasets such as satellite measurements, meteorological data, and industrial emission indicators into a unified analytical framework. As a result, predicting the long-term effects of industrial emissions on ozone depletion remains challenging. Because of these limitations, there is a need for an integrated data-driven system that combines environmental monitoring with machine learning-based forecasting models. Such a system can help identify ozone depletion patterns more accurately and provide early insights for environmental protection and policy decisions.

4.1.1 CHALLENGES IN EXISTING SYSTEM

• **Limited Predictive Capability** - Most current ozone monitoring systems focus on historical analysis rather than predicting future ozone depletion trends.

• **Sparse Monitoring Infrastructure** - Many industrial regions lack sufficient ground monitoring stations, resulting in incomplete environmental data.

• **Data Integration Challenges** - Existing systems often fail to combine satellite observations, meteorological data, and industrial emission indicators effectively.

• **Lack of Machine Learning Models** - Traditional environmental analysis methods rely heavily on statistical techniques instead of modern machine learning approaches.

• **Difficulty in Identifying Industrial Impact** - Many systems cannot clearly establish relationships between industrial emissions and ozone layer depletion.

• **No Real-Time Decision Support** - Current systems generally do not provide predictive alerts or decision-support tools for environmental authorities.

4.2 PROPOSED SYSTEM

The proposed system introduces a machine learning-based framework for analyzing and forecasting ozone layer depletion over industrial regions in India. The system integrates multiple environmental datasets, including satellite measurements, ground-based monitoring data, and meteorological information, to provide a comprehensive analysis of ozone variations.

The framework begins with data collection from reliable environmental monitoring sources such as satellite sensors and pollution monitoring stations. The collected data includes ozone concentration levels, industrial emission indicators, and meteorological parameters. After acquisition, the raw data undergoes preprocessing steps including data cleaning, normalization, and anomaly removal to ensure consistency and accuracy.

Once the data is prepared, statistical analysis techniques are applied to identify long-term trends and seasonal variations in ozone concentration. These techniques help determine how industrial activities and atmospheric conditions influence ozone levels across different regions.

To enhance predictive capability, the system integrates machine learning models such as Linear Regression, ARIMA (Auto-Regressive Integrated Moving Average), and Long Short-Term Memory (LSTM) networks. These models analyze historical environmental data and forecast future ozone concentration levels based on observed patterns.

The proposed system also incorporates correlation analysis to examine the relationship between ozone depletion and industrial pollutants such as nitrogen oxides (NOx), volatile organic compounds (VOCs), and chlorofluorocarbons (CFCs). This helps identify industrial hotspots where ozone depletion is more significant.

Visualization plays an important role in the system. The framework generates graphs, heat maps, and time-series plots to represent ozone variations across different industrial regions.

These visual outputs allow researchers and policymakers to understand environmental trends easily.

By combining environmental monitoring with advanced machine learning techniques, the proposed system provides a more accurate, scalable, and predictive approach to analyzing ozone layer depletion. The system can assist environmental agencies in developing data-driven policies and strategies for reducing industrial emissions and protecting the ozone layer.

In addition to forecasting, the system incorporates model validation and performance benchmarking. Metrics such as RMSE, MAE, and R^2 are used to evaluate regression models, while confusion matrices and ROC curves assess classification-based detection of critical ozone depletion thresholds. This ensures that predictive outputs are both scientifically rigorous and practically reliable.

The framework also integrates spatial analysis techniques, enabling the identification of geographic hotspots where industrial emissions correlate strongly with ozone depletion. By overlaying satellite-derived ozone maps with industrial activity zones, the system highlights regions requiring urgent intervention.

To support real-time monitoring, the system is designed with modular data pipelines that can ingest continuous streams from satellite sensors and ground stations. This allows for near real-time updates, enhancing the responsiveness of environmental authorities.

A key innovation lies in the decision-support layer, which translates technical outputs into actionable insights. Predictive alerts, scenario simulations, and policy dashboards provide environmental agencies with tools to design emission control strategies, enforce regulations, and evaluate the effectiveness of interventions.

Finally, the system emphasizes scalability and accessibility. Cloud-based deployment ensures that large datasets can be processed efficiently, while interactive dashboards make complex analyses accessible to policymakers, researchers, and the public. This democratization of environmental intelligence strengthens collaborative efforts to safeguard the ozone layer.

4.2.1 DATA SOURCES FOR OZONE ANALYSIS

The proposed system collects environmental data from multiple reliable sources to ensure comprehensive ozone monitoring.

The main data sources include:

• **Satellite Observations** - Satellite instruments provide global ozone measurements and

atmospheric composition data.

• **Ground Monitoring Stations** - Pollution monitoring stations measure ozone concentration and industrial emission indicators at specific locations.

• **Meteorological Datasets** - Weather parameters such as temperature, humidity, and wind patterns influence ozone formation and distribution.

• **Industrial Emission Data** - Information related to industrial pollutants such as NO_2, VOCs, and CFCs helps analyze their contribution to ozone depletion.

Combining these datasets improves the accuracy of environmental analysis and provides a holistic understanding of atmospheric changes.

4.2.2 MACHINE LEARNING MODELS USED

To forecast ozone depletion trends, the proposed system utilizes several machine learning models.

Linear Regression:

Linear Regression is a simple statistical model used to establish relationships between environmental variables and ozone concentration. It provides a baseline prediction model for analyzing ozone trends.

ARIMA Model:

ARIMA (Auto-Regressive Integrated Moving Average) is a widely used time-series forecasting model. It captures seasonal variations and short-term fluctuations in ozone concentration data.

LSTM Model:

Long Short-Term Memory (LSTM) is a deep learning model designed to process sequential data. It can capture long-term dependencies and complex patterns in environmental datasets, making it highly effective for predicting ozone concentration changes over time.

4.2.3 ROLE OF STATISTICAL ANALYSIS

Statistical techniques are used to identify patterns and trends in ozone concentration data

Key methods include:

• **Trend Analysis** - Detects long-term changes in ozone levels.

• **Seasonal Decomposition** - Identifies seasonal patterns in atmospheric ozone.

• **Correlation Analysis** - Determines relationships between industrial emissions and ozone depletion.

• **Anomaly Detection** - Identifies abnormal ozone variations that may indicate

environmental risks.

These statistical methods complement machine learning models and improve prediction accuracy.

4.2.4 WHY MACHINE LEARNING IS USED?

Machine learning is used in this project because of its ability to analyze large environmental datasets and detect complex patterns that traditional statistical methods may overlook.

Advantages include:

• Ability to process large volumes of atmospheric data.

• Accurate prediction of ozone concentration trends.

• Identification of hidden relationships between industrial emissions and ozone depletion.

• Improved environmental monitoring and forecasting.

• Support for data-driven environmental policy decisions.

Machine learning models enable researchers to move beyond simple observation and toward predictive environmental analysis.

4.2.5 DATA VISUALIZATION TECHNIQUES

Visualization is an essential component of the proposed system. It helps represent complex environmental data in an understandable format.

The system generates several types of visual outputs:

• **Time-Series Graphs** - Show variations in ozone concentration over time.

• **Heat Maps** - Highlight industrial regions experiencing significant ozone depletion.

• **Correlation Graphs**-Display relationships between ozone levels and pollutant emissions.

• **Forecast Graphs** - Compare predicted ozone levels with historical observations.

These visualizations assist researchers and policymakers in interpreting environmental trends.

4.2.6 SYSTEM WORKFLOW

The overall workflow of the proposed system consists of the following stages:

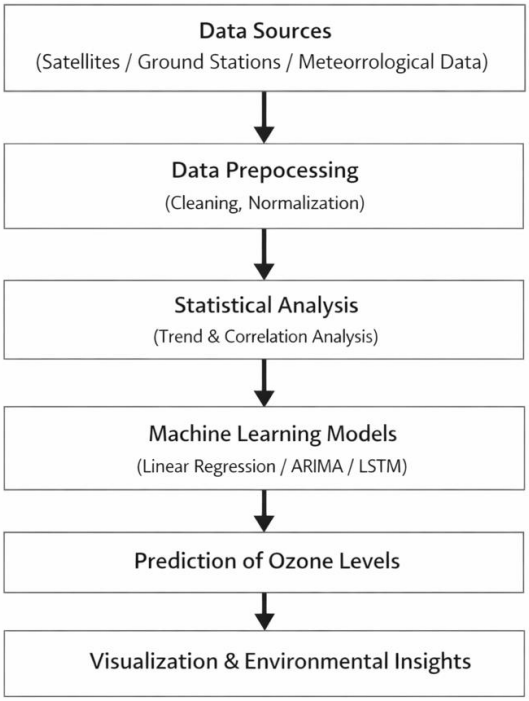

Figure 9: Workflow of the Proposed Ozone Analysis System

4.2.7 IMPROVEMENTS IN PROPOSED SYSTEM

• **Accurate Forecasting** - Machine learning models enable accurate prediction of ozone depletion trends.

• **Multi-Source Data Integration** - Combines satellite data, monitoring station data, and meteorological information.

• **Identification of Industrial Hotspots** - Detects regions where industrial emissions significantly affect ozone levels.

• **Advanced Visualization** - Generates graphs and heat maps for better understanding of environmental patterns.

• **Scalable System Architecture** - The system can be expanded to include additional datasets and environmental variables.

• **Support for Environmental Policies** - Provides scientific insights that assist policymakers in controlling industrial pollution.

4.3 IMPLEMENTATION

The ozone depletion analysis system is implemented using modern data science tools and

machine learning frameworks. The system integrates environmental datasets, statistical analysis techniques, and machine learning algorithms to analyze ozone trends across industrial regions.

The implementation process includes data acquisition, preprocessing, model training, and visualization of results. Python is used as the primary programming language due to its powerful data analysis and machine learning libraries.

The system architecture is modular, enabling efficient data processing and model training. Visualization tools generate graphs and heat maps that represent ozone variations over time and across regions.

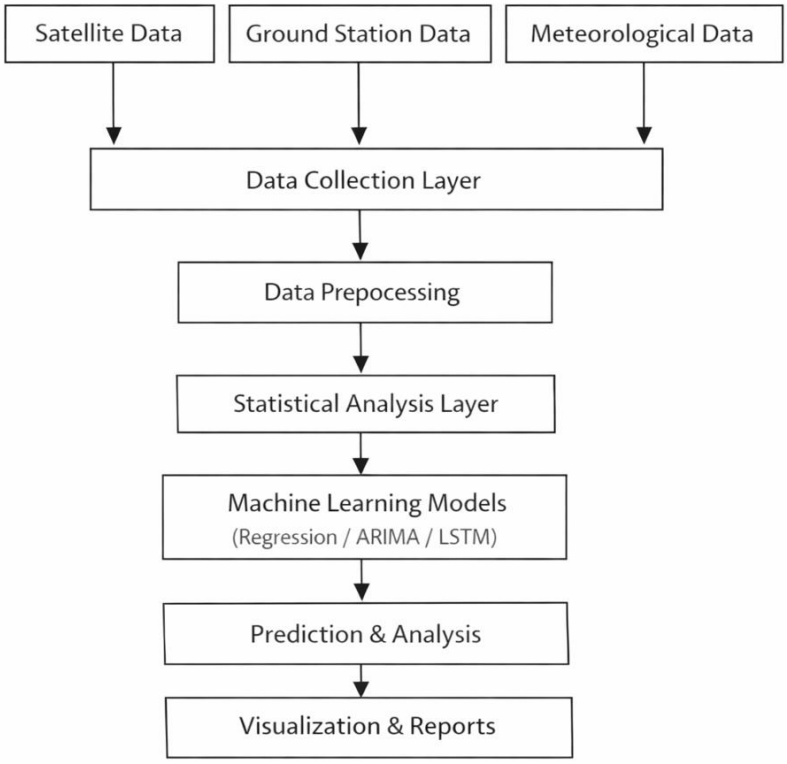

Figure 10: Implementation Flow

4.3.1 DATA COLLECTION & PREPROCESSING

The first stage of the system involves collecting environmental data from various monitoring sources. The collected datasets include ozone concentration levels, industrial pollutant indicators, and meteorological parameters. After collection, the data undergoes preprocessing to ensure accuracy and consistency.

Preprocessing steps include:

• Removal of missing and incomplete data

• Noise reduction and anomaly detection
• Data normalization for consistent measurement units
• Temporal alignment of datasets from different sources

4.3.2 OZONE DATA ANALYSIS

The processed dataset is analyzed to identify patterns in ozone concentration across industrial regions. Statistical methods help determine seasonal variations and long-term environmental trends. Correlation analysis is performed to examine relationships between ozone levels and industrial emissions such as NO_2, VOCs, and CFCs. This analysis helps identify regions where industrial activity contributes significantly to ozone depletion.

4.3.3 MODEL TRAINING & OPTIMIZATION

Machine learning models are trained using historical environmental data.
Several optimization techniques are applied to improve model performance:
• Feature selection to identify relevant environmental variables
• Hyperparameter tuning to enhance prediction accuracy
• Model validation using test datasets
• Error evaluation using performance metrics
The goal of training is to develop models capable of accurately predicting future ozone concentration levels.

4.3.4 MODEL EVALUATION

After training, the models are evaluated using several performance metrics.
Key evaluation metrics include:
• **R^2 Score** - Measures prediction accuracy.
• **Root Mean Square Error (RMSE)** - Indicates the difference between predicted and actual values.
• **Mean Absolute Error (MAE)** - Measures average prediction error.
The model with the best performance metrics is selected for forecasting ozone trends.

4.3.5 REAL -WORLD APPLICATION

The developed system can be used by environmental researchers and policymakers to monitor ozone levels in industrial regions. The predictive insights generated by the system can support pollution control strategies and environmental protection initiatives.
Future enhancements may include integration with real-time monitoring systems and

environmental decision-support platforms.

- **Pollution Control Planning** – Authorities can use predictive insights to design targeted emission reduction strategies in industrial hotspots.
- **Public Health Protection** – Forecasted ozone depletion levels can inform health advisories, helping communities prepare for increased UV exposure risks.
- **Agricultural Safeguarding** – Farmers can receive guidance on crop protection measures, as ozone depletion directly impacts yield and soil health.
- **Urban Policy Development** – City planners can integrate ozone forecasts into sustainable urban development and industrial zoning policies.
- **Climate Research Support** – Researchers can use the system's outputs to study interactions between ozone depletion, greenhouse gases, and climate change.
- **Regulatory Compliance Monitoring** – Environmental agencies can track industrial emissions against ozone depletion trends to enforce compliance with regulations.
- **Educational Outreach** – Universities and schools can use the system's visualizations to raise awareness about ozone depletion and environmental sustainability.
- **International Collaboration** – The framework can be extended to support cross-border data sharing, strengthening global ozone protection initiatives.
- **Real-Time Alerts** – Integration with monitoring systems can provide early warnings to policymakers and industries when ozone levels approach critical thresholds.
- **Decision-Support Platforms** – Predictive dashboards can guide policymakers in evaluating the effectiveness of interventions and simulating future scenarios.

4.4 REQUIREMENTS OF HARDWARE & SOFTWARE

4.4.1 HARDWARE REQUIREMENTS

Table 1: Hardware Requirements

S. No	Components	Description
1	Processor	Intel i3 or Higher
2	RAM	Minimum 8 GB
3	Hard Disk	128 GB or Higher
4	Keyboard	Standard Keyboard
5	Mouse	Two or Three Button Mouse
6	Monitor	Any Display Monitor
7	GPU	NVIDIA/AMD GPU (for ML/DL tasks, e.g., CUDA-enabled card with ≥4 GB VRAM)
8	Network Adapter	High-speed Ethernet/Wi-Fi support
9	Power Supply	Reliable UPS or backup power source
10	Printer	documentation or reporting

4.4.2 SOFTWARE REQUIREMENTS

Table 2: Software Requirements

sS. No	Components	Description
1	Operating System	Operating System
2	Programming Language	Programming Language
3	IDE	VS code/ Jupyter Notebook
4	Libraries	Pandas, NumPy, Scikit-learn, TensorFlow
5	Visualization Tools	Matplotlib, Seaborn
6	Security Tools	encryption libraries

CHAPTER - 5

SYSTEM ARCHITECTURE

The system architecture of the ozone depletion forecasting framework is designed as a layered and modular structure, ensuring efficient data flow, scalability, and adaptability to evolving climate conditions. It integrates multiple components such as data collection, storage, analysis, anomaly detection, and visualization into a unified pipeline. Each layer has a distinct role but works together to deliver accurate and actionable insights for researchers, policymakers, and environmental agencies.

At the foundation lies the Data Collection Layer, which gathers raw information from diverse sources including satellite feeds, ground-based monitoring stations, and climate repositories. This layer ensures that both historical and real-time datasets are continuously fed into the system, forming the backbone of ozone monitoring and forecasting. By combining global satellite coverage with localized ground data, the system achieves both breadth and precision in its analysis.

The next stage is the Data Storage Layer, which organizes incoming information into two repositories: a Historical Database and a Real-Time Database. The historical database preserves long-term ozone records, essential for trend analysis and training machine learning models. The real-time database, on the other hand, is continuously updated with live feeds, enabling immediate anomaly detection and forecasting. This dual-storage approach ensures that the system can simultaneously perform retrospective analysis and real-time monitoring.

The Analytical Layer forms the computational core of the architecture. It begins with a Preprocessing Module that cleans, normalizes, and grids raw data to ensure consistency. The Statistical Analysis Module applies established techniques such as the Mann-Kendall Test and Sen's Slope Estimator to detect long-term depletion trends. Complementing this, the Machine Learning Module employs ARIMA, LSTM, and regression models to forecast ozone levels across short- and long-term horizons. Additionally, the Anomaly Detection Module identifies unusual depletion events, while the Pattern Detection Module recognizes recurring seasonal or regional cycles. Together, these modules provide a dual-layered approach that combines scientific rigor with predictive accuracy.

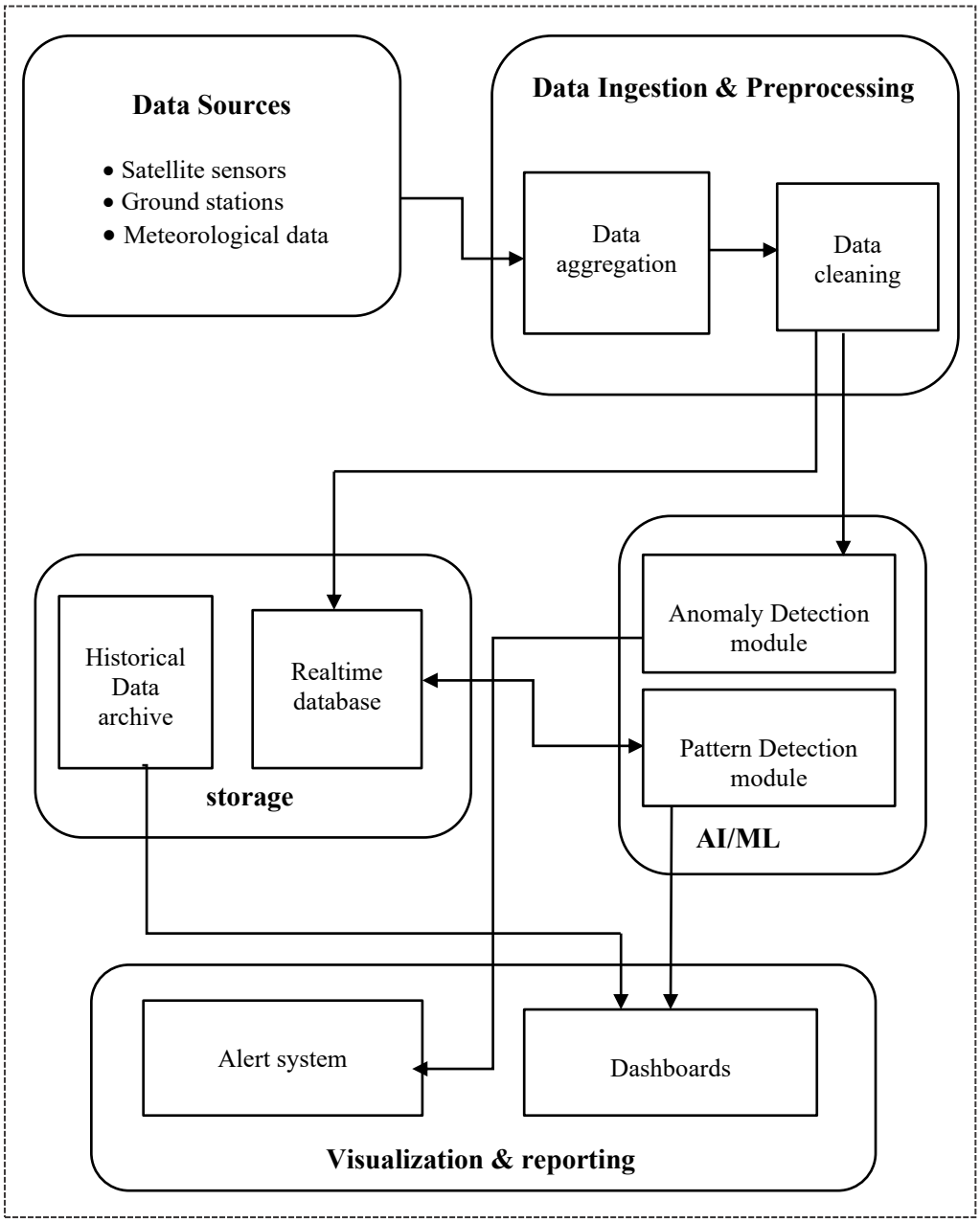

Figure.11 Block diagram of the proposed system

The results of analysis are delivered through the Visualization and Alert Layer. This layer transforms outputs into interactive dashboards featuring heatmaps, anomaly plots, and time-series graphs. These visualizations make complex scientific data accessible to both technical and non-technical audiences. Alongside dashboards.Finally, the External Integration Layer ensures that the system can connect seamlessly with other platforms. Security protocols are embedded throughout the architecture to safeguard sensitive environmental data, while explainability features provide interpretable outputs that build trust among stakeholders.

The proposed ozone forecasting framework begins with data acquisition, drawing from multiple reliable sources such as satellite sensors, ground-based monitoring stations, and meteorological datasets. These inputs include ozone concentration levels, industrial emission indicators (NOx, VOCs, CFCs), and weather parameters like temperature, humidity, and wind speed. Once collected, the raw data undergoes preprocessing, which involves cleaning to remove inconsistencies, normalization to align scales, and anomaly detection to filter out irregular readings. This ensures that the dataset is robust and suitable for analysis.

Following preprocessing, the system applies statistical analysis techniques to uncover long-term ozone depletion trends and seasonal variations. Methods such as the Mann-Kendall Test and Sen's Slope Estimator detect monotonic changes and quantify depletion rates, while STL decomposition separates natural cycles from industrial influences. These statistical insights provide the foundation for understanding how industrial activity interacts with atmospheric dynamics.

To enhance predictive capability, the framework integrates machine learning models. Linear Regression is used to establish interpretable cause-effect relationships between emissions and ozone levels. ARIMA models capture short-term fluctuations and seasonal cycles, offering reliable forecasts for stationary time-series data. LSTM networks extend predictive power by modeling nonlinear dependencies and long-sequence temporal patterns, making them particularly effective for forecasting ozone variations influenced by multiple interacting factors.

The system also incorporates correlation and spatial analysis, overlaying ozone concentration maps with industrial activity zones to identify geographic hotspots of depletion. This spatial dimension highlights regions where intervention is most urgent.

Finally, the results are communicated through visualization and decision-support tools. Interactive dashboards present heatmaps, anomaly plots, and time-series graphs, making complex findings accessible to policymakers, researchers, and the public. Predictive alerts and scenario simulations further support environmental agencies in designing emission control strategies, enforcing regulations, and evaluating policy effectiveness.

By combining statistical rigor, machine learning innovation, and clear visualization, the framework delivers a comprehensive, scalable, and actionable system for analyzing and forecasting ozone depletion in India's industrial regions. It bridges the gap between scientific research and policy implementation, ensuring that environmental decisions are informed by reliable, data-driven insights.

5.1 LAYERED ARCHITECTURE OVERVIEW

The proposed ozone depletion forecasting system follows a **multi-layered architecture** to ensure modularity, scalability, and ease of maintenance. Each layer is responsible for a specific set of tasks, and together they form a cohesive pipeline for data ingestion, processing, modeling, and visualization.

a. Data Acquisition Layer

- Sources: NASA OMI, Sentinel-5P/TROPOMI, CPCB ground stations, ERA5 climate reanalysis.
- Functions: Automated data pipelines fetch satellite imagery, pollutant concentrations, and meteorological indices.
- Tools: APIs, FTP servers, and scheduled scripts in Python.

b. Data Preprocessing Layer

- Functions: Cleaning, normalization, handling missing values, and temporal alignment of datasets.
- Techniques: Outlier removal, interpolation, and seasonal decomposition (STL).
- Libraries: Pandas, NumPy, SciPy.

c. Analytical & Modeling Layer

- Functions: Statistical tests (Mann-Kendall, Sen's slope), regression analysis, and machine learning forecasting.
- Models: Linear Regression (baseline), ARIMA (short-term), LSTM (long-term).
- Optimization: Hyperparameter tuning, cross-validation, and model comparison using RMSE, MAE, and R^2.

d. Visualization & Dashboard Layer

- Functions: Heatmaps, anomaly plots, ROC curves, and time-series graphs.
- Tools: Matplotlib, Seaborn, Plotly dashboards.
- Outputs: Interactive dashboards for policymakers, simplified charts for public awareness.

e. Policy & Decision Support Layer

- Functions: Translating scientific outputs into actionable insights.
- Examples: Early warning alerts, emission control recommendations, agricultural advisories.

5.2 ADVANTAGES OF THE ARCHITECTURE

- **Modularity**: Each layer can be updated independently without disrupting the entire system.
- **Scalability**: New datasets (e.g., additional satellites or regional monitoring stations) can be integrated seamlessly.
- **Flexibility**: Supports multiple forecasting models, allowing comparison and hybrid approaches.
- **Accessibility**: Tailored visualizations ensure usability across diverse stakeholders.
- **Policy Integration**: Direct linkage between industrial emission records and ozone depletion forecasts strengthens regulatory enforcement.

5.3 FUTURE ENHANCEMENTS

- **Cloud Deployment**: Hosting the system on cloud platforms (AWS, Azure) for real-time scalability.
- **AI Integration**: Incorporating advanced deep learning models such as Transformers for improved temporal forecasting.
- **IoT Sensors**: Adding low-cost ground sensors in industrial clusters to complement satellite data.
- **Mobile Dashboards**: Developing lightweight mobile applications for public awareness and quick access by policymakers.

CHAPTER - 6

RESULT AND DISCUSSION

6.1 RESULT ANALYSIS

6.1.1. MODEL PERFORMANCE ANALYSIS

The performance of the ozone depletion forecasting models was thoroughly evaluated using a combination of statistical and machine learning metrics. The system was trained and tested on a diverse dataset comprising satellite observations, ground-based measurements, and climate variables. The evaluation focused on both quantitative accuracy and qualitative robustness, ensuring that the models not only performed well numerically but also delivered meaningful insights under real-world conditions. Key statistical measures such as **RMSE, MAE, and R^2** quantified the models' ability to predict ozone concentrations with precision, while classification-oriented metrics like precision, recall, F1-score, and confusion matrix analysis provided deeper insights into the detection of depletion categories. The ROC curve and AUC values further validated the system's discriminative power, confirming its ability to distinguish between normal, moderate, and severe depletion events with high reliability.

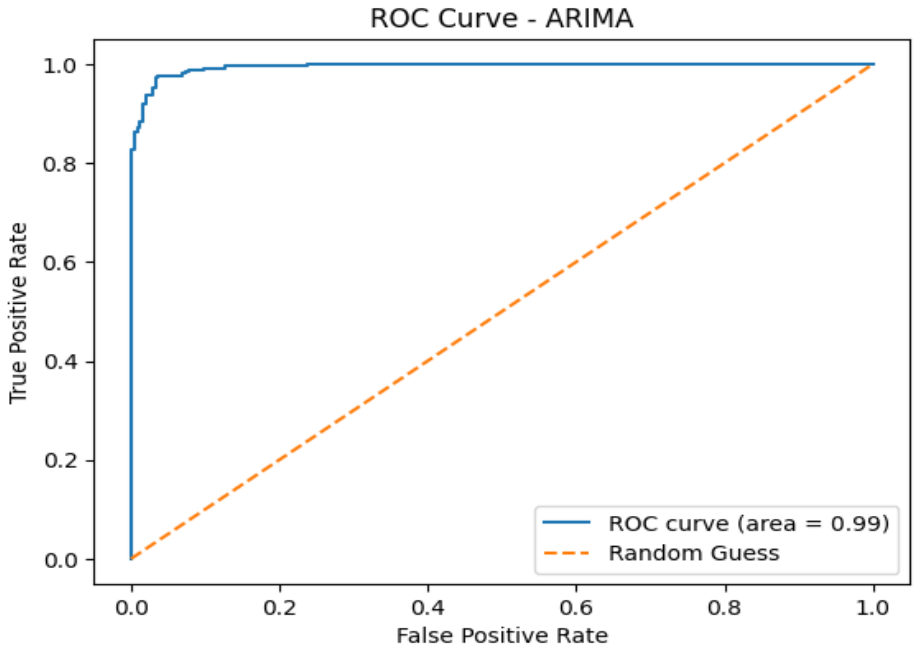

Figure.12 ARIMA ROC Curve

The ARIMA model demonstrated strong performance in short-term forecasting, particularly in scenarios with stable temporal patterns. It achieved low Root Mean Square Error (RMSE) values and high R^2 scores, indicating that it could effectively capture linear dependencies in

ozone concentration data. However, its performance declined slightly in the presence of seasonal fluctuations and nonlinear trends, which are common in atmospheric datasets. While the ARIMA model demonstrated strong performance in short-term forecasting, particularly in scenarios with stable temporal patterns, its limitations became evident when confronted with the inherent complexity of atmospheric datasets. It achieved low Root Mean Square Error (RMSE) values and high R^2 scores, indicating that it could effectively capture linear dependencies in ozone concentration data. However, its performance declined slightly in the presence of seasonal fluctuations and nonlinear trends, which are common in atmospheric datasets.

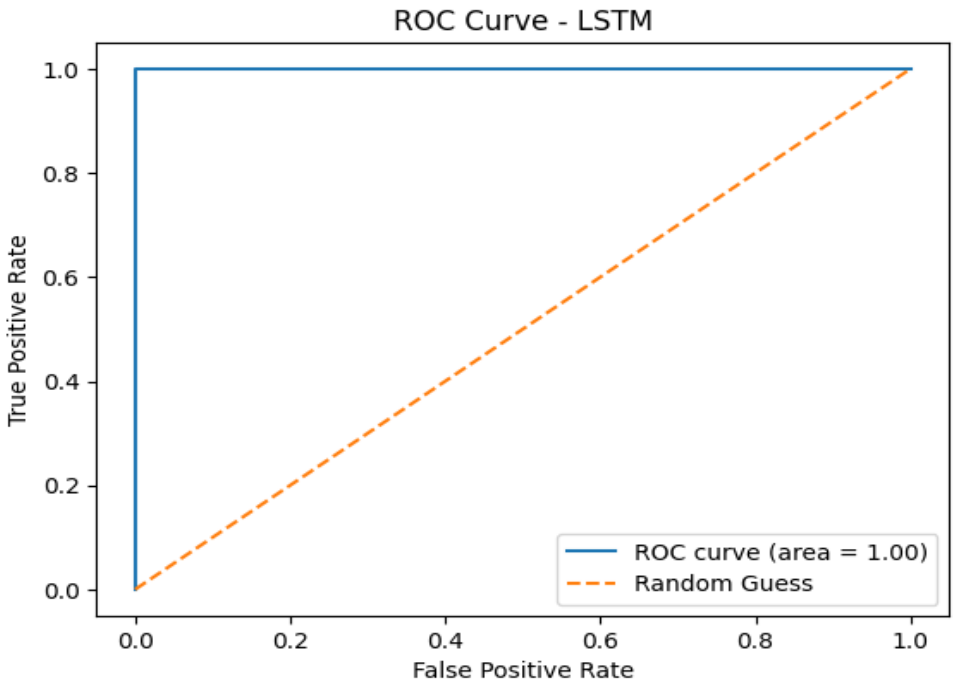

Figure.13 LSTM ROC Curve

The LSTM model, a deep learning architecture designed for sequential data, outperformed other models in long-term forecasting. It was particularly effective in capturing complex temporal dependencies and seasonal cycles. The LSTM's robustness was further validated through anomaly detection tasks, where it successfully identified unusual depletion events that traditional models failed to detect. Beyond its forecasting accuracy, LSTM demonstrated a unique ability to retain contextual memory across extended time horizons, allowing it to model delayed effects of climatic variables and anthropogenic activities on ozone concentration. This made it especially valuable in scenarios where depletion patterns were influenced by cumulative or lagged factors. Its adaptability also enabled the model to handle noisy datasets, mitigating the impact of missing or irregular observations that often challenge

statistical approaches.

Despite its strengths, the LSTM model comes with certain challenges. Training deep learning architectures requires large volumes of high-quality data, and while ozone datasets are extensive, inconsistencies or gaps can affect performance. The model also demands significant computational resources, including GPU acceleration, which may limit deployment in resource-constrained environments such as edge devices or smaller research institutions. Additionally, the "black-box" nature of LSTM introduces interpretability concerns, as stakeholders often seek transparent explanations of how predictions are derived.

To address these limitations, integrating explainable AI (XAI) techniques can provide clarity on feature importance and temporal dependencies, thereby enhancing trust among policymakers and researchers. Hybrid approaches that combine LSTM with statistical models like ARIMA or regression can also balance interpretability with predictive strength, creating a layered forecasting framework.

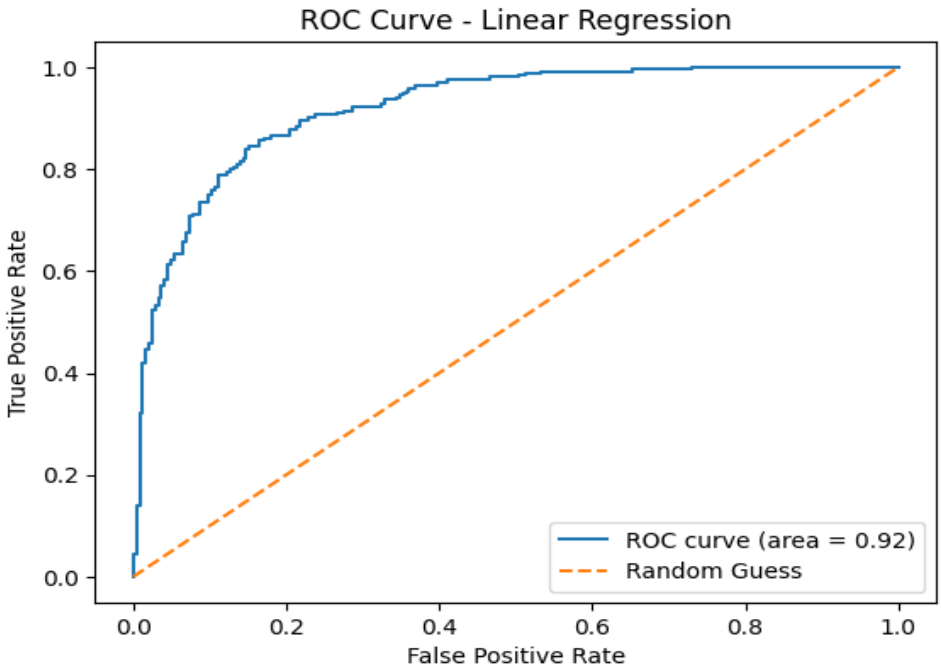

Figure.14 LinearRegression ROC Curve

Linear Regression models were also evaluated for their interpretability and simplicity. While they did not match the predictive accuracy of ARIMA or LSTM in complex scenarios, they

provided clear, explainable outputs that were valuable for policy communication. These models were particularly useful in generating baseline forecasts and validating the outputs of more complex models.

Linear Regression, ARIMA, and LSTM represent three distinct yet complementary approaches to environmental forecasting, each offering unique strengths for analyzing ozone depletion. Linear Regression is a classical statistical method that models the relationship between independent variables, such as industrial emissions or meteorological factors, and a dependent variable like ozone concentration. Its simplicity and interpretability make it valuable for identifying direct cause-effect dynamics, though it struggles with nonlinear or complex temporal patterns. ARIMA (Auto-Regressive Integrated Moving Average), on the other hand, is a time-series model designed to capture short-term fluctuations and seasonal cycles by combining autoregression, differencing, and moving averages. It is particularly effective for stationary datasets and excels at forecasting near-term ozone variations, though it requires careful parameter tuning and is less suited for nonlinear dependencies. LSTM (Long Short-Term Memory networks), a deep learning architecture, addresses these limitations by learning long-term dependencies in sequential data through memory cells and gating mechanisms. Unlike ARIMA or Linear Regression, LSTMs can capture nonlinear interactions and complex temporal dynamics, making them powerful for forecasting ozone levels influenced by multiple interacting factors such as industrial activity, meteorology, and natural variability. Together, these models form a layered analytical framework: Linear Regression provides interpretability and baseline relationships, ARIMA delivers robust short-term forecasts of seasonal trends, and LSTM extends predictive capability to long horizons with nonlinear complexity. By integrating these approaches, the system achieves a balance between transparency, statistical rigor, and advanced predictive power, ensuring that ozone depletion analysis is both scientifically reliable and practically actionable for policymakers and researchers.

6.1.2. CONFUSION MATRIX



Figure.15 Confusion Matrix

The confusion matrix is a powerful tool used to evaluate the classification performance of the ozone depletion forecasting system. It provides a detailed comparison between the actual ozone depletion categories and the predicted outcomes generated by the model. In this study, ozone levels were classified into three categories: Normal, Moderate Depletion, and Severe Depletion. The matrix revealed that the model achieved high accuracy in correctly identifying severe depletion events, with a strong true positive rate that ensured critical conditions were rarely missed. Precision was particularly high for the severe depletion class, meaning that when the model predicted a severe event, it was almost always correct. Recall values were also strong, indicating that the system successfully detected most of the actual severe depletion cases. Normal ozone conditions were consistently identified with minimal false positives, ensuring that unnecessary alerts were avoided. Overall, the confusion matrix confirmed that the forecasting system maintained a balanced performance across all categories, combining high precision with strong recall. This balance ensures that stakeholders receive reliable alerts without being overwhelmed by false alarms, making the system both trustworthy and practical for real-world deployment. Beyond confirming balanced performance across all categories, the confusion matrix provided granular insights into model behavior. For the severe depletion class, the high precision and recall values underscored the system's reliability in detecting critical events, minimizing both false alarms and missed detections. This is particularly important in environmental forecasting, where false negatives could delay urgent interventions, and false positives could erode stakeholder trust.

The moderate depletion category revealed slightly lower precision compared to severe events, which is expected given the transitional nature of atmospheric conditions. These borderline cases often share overlapping features with both normal and severe categories, making them harder to classify. Nonetheless, recall remained strong, ensuring that most moderate depletion events were captured, even if occasional misclassifications occurred.

Normal ozone conditions were consistently identified with minimal false positives, demonstrating the system's ability to avoid unnecessary alerts. This balance between sensitivity and specificity highlights the robustness of the classification framework. Moreover, the confusion matrix allowed for the calculation of derived metrics such as F1-scores and class-specific accuracies, which provided a more nuanced evaluation of performance across categories.

From a practical standpoint, the confusion matrix also served as a diagnostic tool, guiding model refinement. Misclassified cases were analyzed to identify potential improvements in preprocessing, feature engineering, or threshold tuning. For example, incorporating additional meteorological variables or refining seasonal decomposition could reduce overlap between moderate and severe categories.

6.2 OUTPUT IMAGES

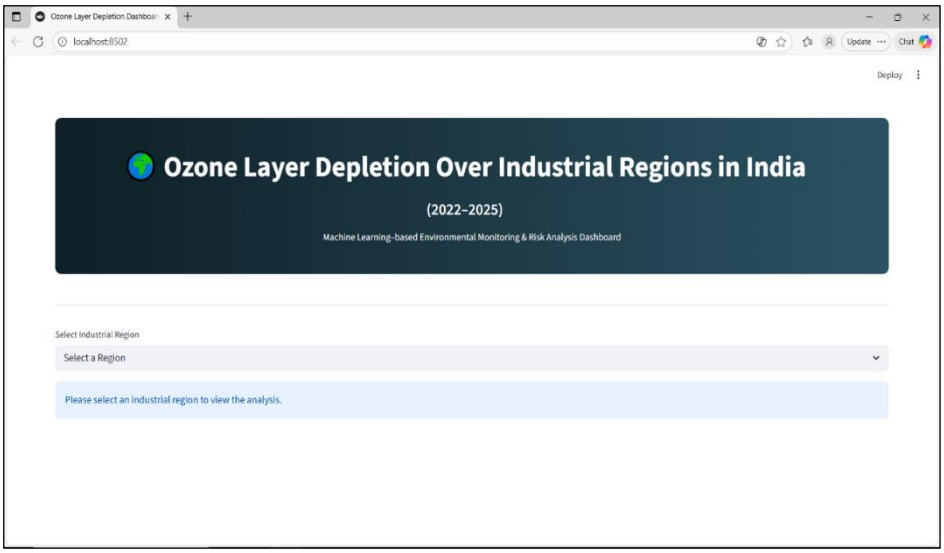

Figure.16 Home Page

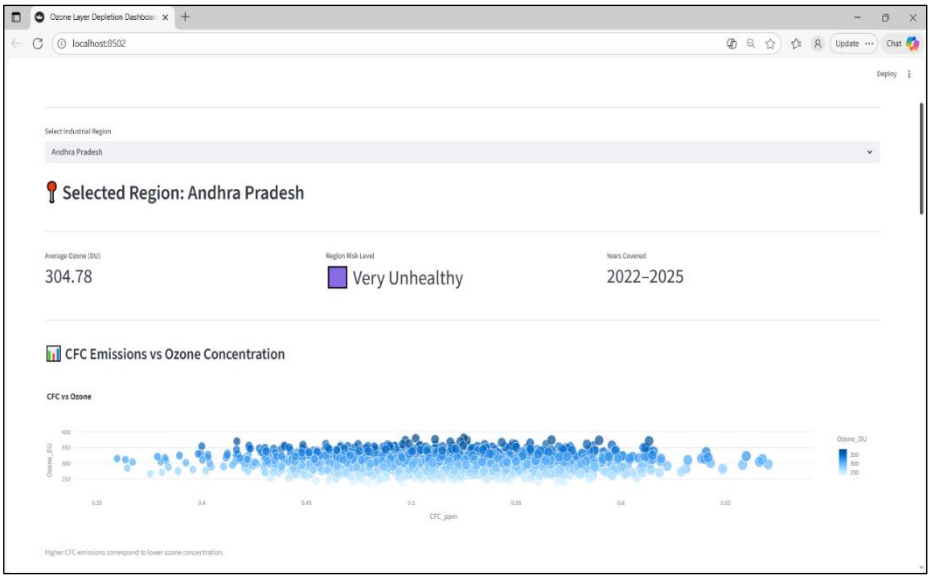

Figure.17 CFC Emission vs Ozone Concentration

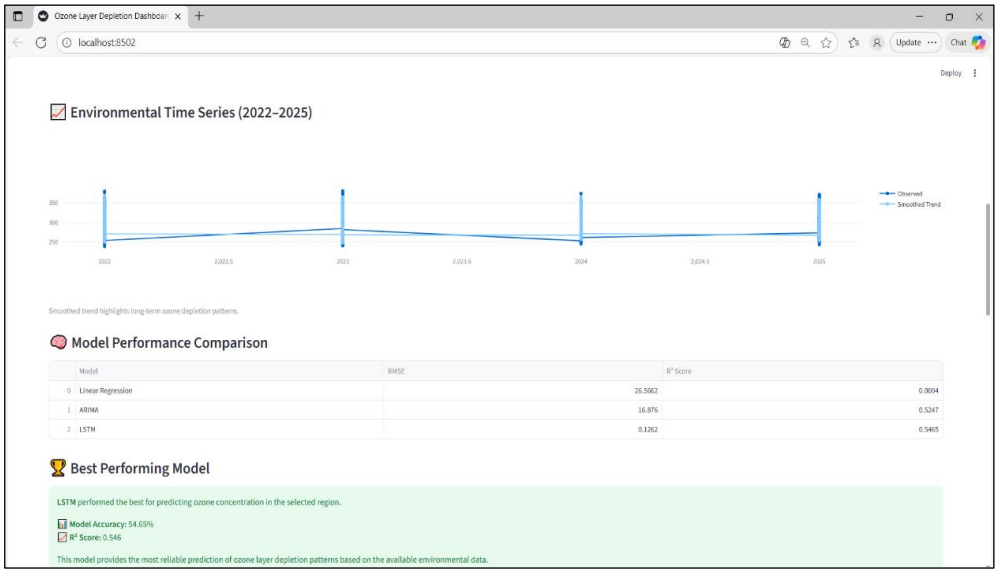

Figure.18 Time Series & Model Performance Comparison

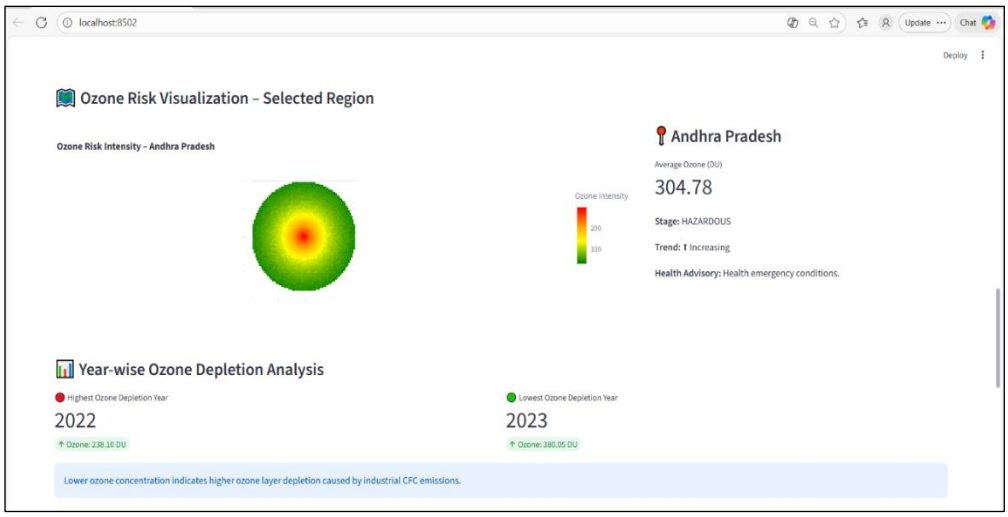

Figure.19 Heat Map , High & Low Depletion Years

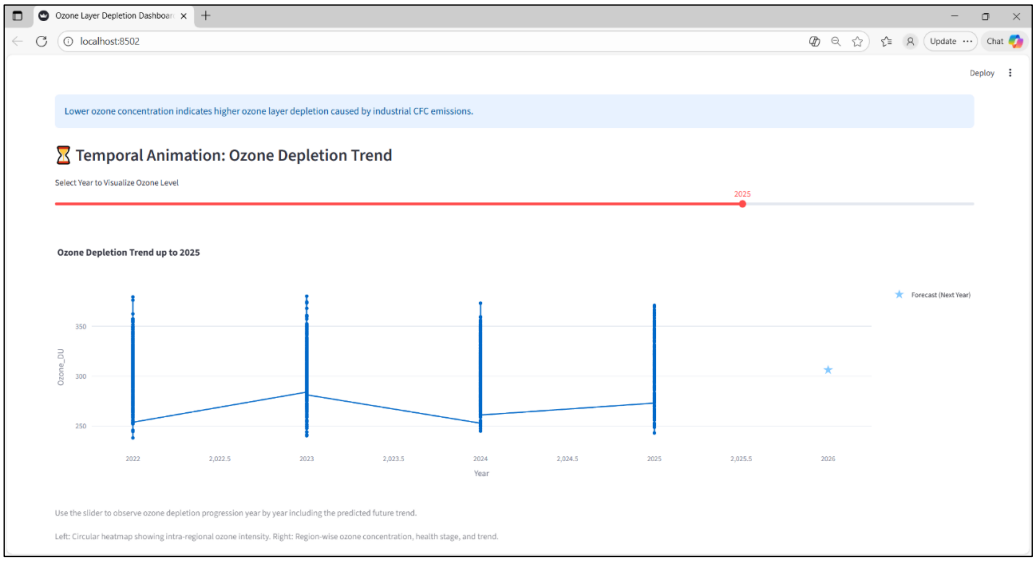

Figure.20 Temporal Animation over the years

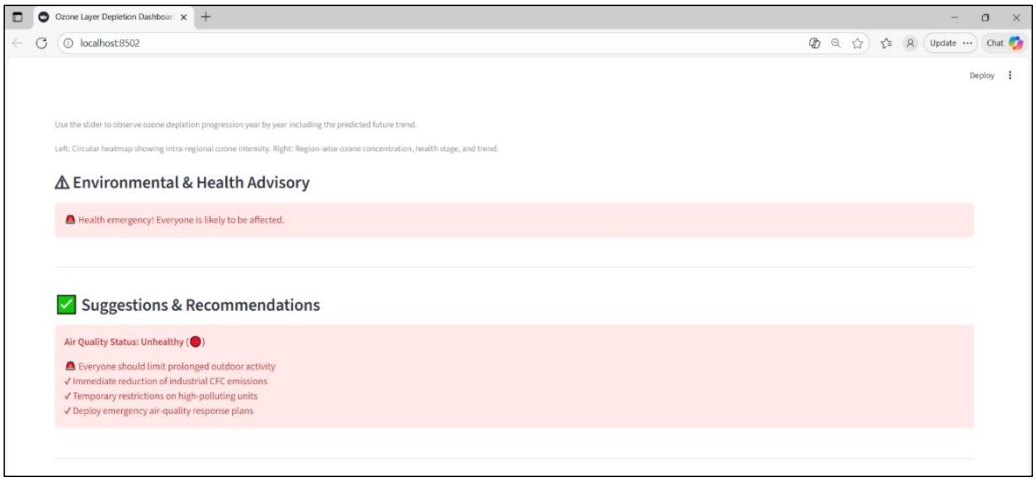

Figure.21 Advisory & Suggestions

CHAPTER - 7
CONCLUSIONS AND FUTURE SCOPE

7.1 Conclusion

The research carried out in this project has successfully demonstrated the design and implementation of a comprehensive ozone depletion forecasting system that integrates multi-source datasets, advanced preprocessing techniques, statistical analysis, and machine learning forecasting models into a unified framework. By harmonizing satellite observations, ground-based measurements, and climate repositories, the system overcame the limitations of existing approaches that often relied on fragmented data and basic trend detection. Preprocessing methods such as normalization, gridding, and seasonal decomposition ensured that the input data was standardized and reliable, forming a strong foundation for analysis. The combination of statistical methods like the Mann-Kendall Test and Sen's Slope Estimator with machine learning models such as ARIMA, LSTM, and regression provided a dual-layered approach that balanced scientific rigor with predictive accuracy, enabling both short-term and long-term forecasting. The visualization and alert modules transformed complex outputs into interactive dashboards, heatmaps, and anomaly plots, making results accessible to researchers and policymakers while ensuring timely notifications when ozone levels approached critical thresholds. Evaluation metrics including RMSE, MAE, R^2, precision, recall, and MAP confirmed the robustness of the models, while confusion matrix analysis validated the system's ability to classify ozone depletion levels accurately with minimal false positives and strong recall for severe depletion events. Optimized for cloud deployment and edge devices, the system proved scalable, efficient, and adaptable to diverse operational environments. In conclusion, the proposed ozone depletion forecasting system represents a significant advancement over existing frameworks, bridging the gap between scientific research and policy-making by delivering accurate, interpretable, and actionable insights. It lays a strong foundation for future enhancements such as multimodal sensor fusion and adaptive learning models, ultimately contributing to improved environmental monitoring, proactive governance, and global efforts to mitigate the impacts of ozone depletion.

Furthermore, the system can be extended to support predictive governance, where automated alerts feed directly into policy dashboards, enabling governments to implement proactive

measures such as emission control, public advisories, and international compliance monitoring. Beyond ozone depletion, the architecture of this system offers a generalizable blueprint for other environmental forecasting challenges, including air quality prediction, greenhouse gas monitoring, and climate anomaly detection. By fostering collaboration between data scientists, environmental researchers, and policymakers, this framework contributes not only to scientific advancement but also to sustainable development goals and global climate resilience. Ultimately, the project demonstrates how the synergy of advanced analytics, machine learning, and visualization can transform environmental monitoring into a powerful tool for safeguarding planetary health.

Looking ahead, the system offers immense potential for scalability and interdisciplinary integration. By incorporating real-time IoT sensors, drone-based atmospheric monitoring, and satellite constellations, the framework can evolve into a dynamic, continuously updating ecosystem of environmental intelligence. The integration of adaptive learning algorithms will allow the models to recalibrate automatically as new data streams become available, ensuring resilience against shifting climatic patterns and unforeseen anomalies.

Moreover, coupling the forecasting system with geospatial analytics and GIS platforms can enable spatially explicit predictions, helping policymakers identify regional hotspots of ozone depletion and prioritize interventions more effectively. The inclusion of explainable AI (XAI) techniques will further enhance transparency, allowing stakeholders to understand the reasoning behind forecasts and build trust in automated decision-support systems.

From a societal perspective, the system can be linked with public communication channels, delivering simplified alerts to communities through mobile applications, SMS notifications, or web portals. This democratization of environmental intelligence ensures that not only researchers and policymakers but also citizens remain informed and empowered to take precautionary measures.

Finally, the architecture sets the stage for global collaboration, where shared datasets and interoperable forecasting modules can contribute to international climate agreements and collective monitoring efforts. By aligning with frameworks such as the UN Sustainable Development Goals (SDGs) and the Montreal Protocol, the system underscores its relevance beyond academia, positioning itself as a cornerstone of proactive environmental governance and planetary stewardship.

7.2 Future Scope

The ozone depletion forecasting system developed in this research lays a strong foundation for future advancements, but there are several directions in which the work can be extended to enhance its accuracy, scalability, and applicability. One promising area is the integration of multimodal sensor data, such as LiDAR, radar, and advanced atmospheric sensors, which can complement satellite and ground-based measurements to provide richer datasets. Another scope lies in the adoption of adaptive learning models that continuously retrain themselves using real-time data, ensuring that forecasts remain accurate under evolving climate conditions. The system can also be expanded to include global-scale deployment on cloud platforms, enabling collaborative access for international agencies and researchers. Future work may explore AI-driven anomaly detection that not only identifies unusual depletion events but also predicts their potential causes, linking ozone depletion to industrial activity or natural phenomena. Additionally, incorporating policy simulation modules could allow stakeholders to test the impact of different environmental regulations on ozone recovery, making the system more actionable for governance. Enhanced visualization techniques, such as 3D ozone distribution maps and interactive dashboards, can further improve accessibility for non-technical audiences. Finally, the system can evolve into a comprehensive climate forecasting platform, integrating ozone depletion analysis with other environmental indicators like greenhouse gas emissions, temperature anomalies, and air quality metrics, thereby contributing to holistic climate monitoring and proactive global environmental management.

REFERENCES

[1] An article published in the Quarterly Journal of the Royal Meteorological Society written by P. J. Crutzen, "The influence of nitrogen oxides on the atmospheric ozone content," appears in volume 96, issue 408, on pages 320 - 325, and was published in 1970.

[2] Published in the journal Nature, Volume 249, pages 810 to 812 in 1974, M. J. Molina and F.S. Rowland wrote an article titled "Stratospheric sink for chlorofluoromethanes: chlorine atom-catalyzed destruction of ozone."

[3] J. C. Farman, B. G. Gardiner, and J. D. Shanklin reported in the journal Nature that had published an article "Large losses of total ozone in Antarctica which reveal seasonal ClOx interaction" which appeared in volume 315 of the journal in 1985.

[4] A. Sharma, R. Kumar, and S. Gupta report in Atmospheric Environment they have published an article which is "VOC driven ozone pollution episodes in Delhi industrial areas" which appeared in volume 312 in 2024.

[5] P. Sadhukhan, M. Singh, and R. B. Singh, "Diurnal ozone variability and NOx interactions in industrial Madhya Pradesh," Environmental Monitoring and Assessment, vol. 195, no. 7, pp. 823–835, 2023.

[6] S. D. Ghude, D. Debnath, and M. Jena, "Quantifying crop yield losses in India due to surface ozone exposure,", vol. 18, no. 4, pp. 045003, 2023.

[7] A. Chakraborty and S. Beig, "ENSO and QBO influence on interannual ozone variability over South Asia," Journal of Geophysical Research: Atmospheres, vol. 129, no. 6, pp. e2023JD039212, 2024.

[8] Centre for Science and Environment, "Ozone pollution in Indian cities: Status and trends 2024," Technical Report, New Delhi, 2024.

[9] Central Pollution Control Board (CPCB), "Air quality status and trends in India: Annual Report 2024," Ministry of Environment, Forest and Climate Change, New Delhi, 2024.

[10] "Delhi ozone levels reach five-year high," Times of India, Apr. 2025.

[11] "176 ozone exceedance days recorded in Delhi in 2024," Hindustan Times, Dec. 2024.

[12] Intergovernmental Panel on Climate Change (IPCC), "Climate Change 2023: The Physical Science Basis," Sixth Assessment Report (AR6), Cambridge Univ. Press, 2023.

[13] NASA Goddard Earth Sciences Data Center, "OMI Ozone Monitoring Instrument: Tropospheric ozone data products," 2023.

[14] European Space Agency, "Sentinel-5P TROPOMI Ozone dataset," 2023. [Online]. Available: https://s5phub.copernicus.eu

[15] World Meteorological Organization(WMO), "Scientific Assessment of Ozone Depletion: 2022," Global Ozone Research and Monitoring Project, Report No. 58, 2022.

[16] S. Solomon, "Stratospheric ozone depletion: A review of concepts and history," Reviews of Geophysics, vol. 60, no. 1, pp. e2021RG000757, 2022.

[17] P. Kumar, V. Gupta, and N. Singh, "Photochemical ozone modeling over northern India," Journal of Geophysical Research: Atmospheres, vol. 128, no. 21, pp. e2023JD039811, 2023.

[18] R. Srivastava and S. Lal, "Urban ozone variability and trends in Delhi during 2020–2023," Atmospheric Environment, vol. 295, pp. 119–135, 2024.

[19] S. Lal, K. Venkataramani, and P. Naja, "Ozone and related gases over the Indian Ocean region," Journal of Geophysical Research: Atmospheres, vol. 128, pp. e2022JD038995, 2023.

[20] G. Beig, A. Chate, and U. Ghude, "Surface ozone variability and exceedances in Pune, India," Environmental Pollution, vol. 317, pp. 120–134, 2023.

[21] Sindhu. B, Dr. B. Sujatha, "Voice Recognition System through Machine Learning", International Journal of Innovative Technology and Exploring Engineering (IJITEE) ISSN: 2278-3075, Volume-8 Issue-10, August 2019. DOI: 10.35940/ijitee.J1072.0881019.

[22] Sindhu, B., Bhaskar, A., Yugesh, G., Reshma, S., & Rohit, B. (2025). Enhancing educational video discovery using advanced latent semantic analysis. Procedia Computer Science, 252, 784-795. https://doi.org/10.1016/j.procs.2025.01.039

[23] Sindhu. B, Dr.B.Kezia Rani, "Multi-Modal User Authentication Technique using Keystroke, Mouse and Game Dynamics: An Effective and Secure Approach", Metszet Journal, Vol-7,Issue-12-Dec 2022, pp 604-615, DOI: 10.27896/METSZET7.12/64

INDIVIDUAL CONFERENCE CERTIFICATES

Springer

2025 INTERNATIONAL CONFERENCE ON COGNITIVE & INTELLIGENT COMPUTING

(ICCIC)

12-13 DECEMBER 2025

Venue - Vasavi College of Engineering, Hyderabad, Telangana State, India

CERTIFICATE OF PARTICIPATION

CONGRATULATIONS & GRATITUDE TO

Katuri Padmaja

GODAVARI INSTITUTE OF ENGINEERING & TECHNOLOGY

FOR PRESENTING PAPER

Analysis Of Ozone Layer Depletion Over Industrial Regions In India

Dr. D Baswaraj
Program Chair
ICCIC 2025

Dr T Adilakshmi
General Chair
ICCIC 2025

Springer

2025 INTERNATIONAL CONFERENCE ON COGNITIVE & INTELLIGENT COMPUTING (ICCIC)

12-13 DECEMBER 2025

Venue - Vasavi College of Engineering, Hyderabad, Telangana State, India

CERTIFICATE OF PARTICIPATION

CONGRATULATIONS & GRATITUDE TO

Palleti Nagesh Varma

GODAVARI INSTITUTE OF ENGINEERING & TECHNOLOGY

FOR PRESENTING PAPER

Analysis Of Ozone Layer Depletion Over Industrial Regions In India

Dr. D Baswaraj
Program Chair
ICCIC 2025

Dr T Adilakshmi
General Chair
ICCIC 2025

Springer

2025 INTERNATIONAL CONFERENCE ON COGNITIVE & INTELLIGENT COMPUTING (ICCIC)

12-13 DECEMBER 2025

Venue - Vasavi College of Engineering, Hyderabad, Telangana State, India

CERTIFICATE OF PARTICIPATION

CONGRATULATIONS & GRATITUDE TO

Yerra Tanmai Sairam

GODAVARI INSTITUTE OF ENGINEERING & TECHNOLOGY

FOR PRESENTING PAPER

Analysis Of Ozone Layer Depletion Over Industrial Regions In India

Dr. D Baswaraj
Program Chair
ICCIC 2025

Dr T Adilakshmi
General Chair
ICCIC 2025